5/31/05 PB 205 Pg 71

2005 00013124
Bk: 205Pg: 71 Page: 1 of 15
Recorded: 05/31/2005 12:04 PM

APPROVAL UNDER THE SUBDIVISION CONTROL LAW REQUIRED:
NORTHAMPTON PLANNING BOARD
DATE: 5.12.05
George Kolowich

THE RIDGE

DEFINITIVE SUBDIVISION
IN
NORTHAMPTON, MASSACHUSETTS

September, 2004
Revision January, 2005
Revision February, 2005
Revision March, 2005
Revision April, 2005

PREPARED FOR:
SOVEREIGN BUILDERS, INC.
135 SOUTHAMPTON ROAD
WESTHAMPTON, MA. 01027

PREPARED BY:
HUNTLEY ASSOCIATES, P.C.
30 INDUSTRIAL DRIVE EAST
NORTHAMPTON, MA. 01060

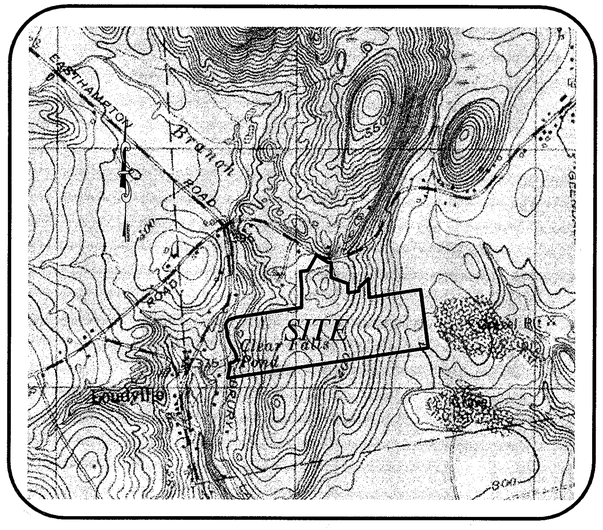

LOCUS MAP
SCALE 1"= 1000'

SHEET INDEX

SHEET 1	COVER SHEET
SHEET 2	CONSTRUCTION NOTES AND LEGEND
SHEET 3	EXISTING CONDITIONS OVERALL VIEW
SHEET 4	OVERALL LOT LAYOUT
SHEET 5-7	LOT LAYOUT (SCALED VIEW)
SHEET 8	LAYOUT AND MATERIALS PLAN
SHEET 9	GRADING, UTILITIES AND EROSION CONTROL PLAN
SHEET 10	ROADWAY PLAN PROFILE
SHEET 11	UTILITIES PLAN PROFILE
SHEET 12-14	CONSTRUCTION DETAILS
SHEET 15	PHOTOMETRIC PLAN

MAY 24, 2005
Assistant City Clerk signs that no appeal has been filed within 20 day appeal period of the date the decision was filed FEBRUARY 22, 2005
Heidi S Sawicki

5/31/05 PB 205 Pg 72

APPROVAL UNDER THE SUBDIVISION CONTROL LAW REQUIRED:
NORTHAMPTON PLANNING BOARD
DATE: 5 12 05

GENERAL NOTES

1. All excavation shall comply with OSHA's latest standards. All requirements of OSHA's excavation standards shall be provided by the Contractor including, but not limited to, the provision for a competent person (foreman) to ensure compliance. The City of Northampton, through its resident engineer, shall expressly not provide any of the above requirements designated by OSHA's excavation standard.
2. The Contractor shall submit an estimated construction schedule relating to the recommended sequence of construction. The suggested sequence of construction has been provided as a general reference to assure the required compliance with technical standards and with requirements of the permitting agencies. The Contractor may provide an alternate sequence of construction clearly describing his materials, techniques and time frames for approval by the Engineer, and coordinate with daily facility operations.
3. Generally, the Contractor's staging area for access, storage of surplus materials and equipment is limited to designated areas. No work, stockpile of materials, storage of equipment, or other operations of the Contractor shall take place outside of these areas or on the abutting properties unless specifically authorized by the Engineer, facility manager, and abutting property owner. The Contractor at his own expense shall repair any disturbance of these areas.
4. The utilities shown are not guaranteed as to their accuracy or completeness. It shall be the responsibility of the Contractor to locate all existing utilities in the field. It is required that the Contractor contact DIG-SAFE (1-888-344-7233) at least 72 hours prior to construction. No excavation will be allowed without a valid DIG-SAFE number.
5. The property line and topographic information shown on the plans were developed from a field survey by Huntley Associates, P.C. (HAPC) during the month of June 2003. Survey detail as shown hereon is the direct result of an on-the-ground survey performed by HAPC on June 12, 2003 and incorporation of USGS topographic information. Additional field survey was performed on August 26, 2003 and November 12, 2003. The Contractor shall preserve all survey stakes to the extent possible or replace damages station stakes as directed by the Engineer if required.
6. Locations of utilities shown herein are the result of surface evidence as located by field survey, plans of record and other available sources. This plan does not necessarily depict the exact locations of all utilities that may exist at this time.
7. The Contractor shall preserve and protect all bounds and property marks shown on the plans, located by the Engineer in the field, or located during the course of the construction. A Registered Land Surveyor at the Contractor's expense shall restore any property marks disturbed or destroyed for any reason.
8. The Contractor shall be solely responsible for laying out all items of the work based on certain horizontal control and benchmark supplied by the surveyor of record. Any discrepancies shall be immediately reported to the Engineer.
9. The surveyor can layout proposed centerline and provide on-site benchmarks for the contractors use at contractors expense. It is the responsibility of the contractor to protect the layout and create offsets.
10. It shall be the Contractor's responsibility to maintain all utilities functioning properly in the areas of construction. All pipes and structures within the limits of this contract shall be left in a clean and operable condition at the completion of the work. The Contractor shall take all necessary precautions to prevent sand and silt from disturbed areas from entering the drainage system. Contractor is responsible for damage sustained to any existing utilities and it is his responsibility to make repairs to the requirements of the The City of Northampton or respective utility company.
11. The Contractor shall provide all materials, labor, equipment, permits and appurtenances necessary to complete the project as indicated on the plans and in these specifications.
12. The Contractor shall be responsible for a thorough site examination in order to prepare site for construction.
13. Any and all demolished trees, structures and other rubble material pertaining to this project shall be disposed of by the Contractor off-site at their expense in accordance with The City of Northampton and all applicable state and federal environmental regulations.
14. All pavement disturbed by the Contractor's operations shall be replaced in accordance with the specifications and as shown on the drawings.
15. In paved areas the top of the manhole cover shall be set flush with the paved surface. In cross-country areas, the top of the cover shall extend 6 inches above finished grade, or as shown on the drawings, or as directed by the Engineer.
16. Trench sheeting shall be used where shown on the drawings or as directed by the Engineer and It shall be left in place below a line 12 inches above the top of the pipe unless otherwise directed by the Engineer.
17. All materials and methods are to comply with The City of Northampton Department of Public Work standards, unless otherwise directed by the Engineer.
18. Permits will be required by Contractor when working within or occupying public way. Contractor is responsible for obtaining all required work permits and maintaining a copy of all permits on-site at all times.
19. Backfill will be placed in successive layers not more than twelve inches in thickness and shall be compacted to 90% of maximum dry density (PER ASTM 698) for all applicable types of backfill material. No frozen material shall be used as backfill. If, in the opinion of the Engineer or the DPW, the excavated material is unsuitable, the entire material for backfilling shall consist of approved gravel or approved borrow, as directed. All trench and roadway backfilling shall be compaction tested using nuclear methods (ASTM 5195-02). In field dry density shall be at least 90% of maximum dry density obtained from ASTM-698.

DRAINAGE NOTES

1. Pipe drains shall be sized as shown on plans and shall be Rienforced Concrete Pipe (RCP). All pipe joints shall be approved composition, size and shape to provide for a proper joint.
2. All pipes drains shall have magnetic utility warning tape. The tape shall be buried approx. 2 feet below finish grade.
3. See general notes for detailed backfill.
4. Manhole cover shall have three (3) inch lettering to read "DRAIN" and shall be 26-inches in diameter.
5. All catch basins shall connect directly to drain manholes. Catch basin grates shall be squared, Type F, as manufactured by Lebaron Foundry Company, Box 746, Brockton, Ma.02403, or approved equal.

PLANTING AND SEEDING NOTES

1. All nursery stock shall be in conformance with the American Standard For Nursery Stock, as published by the American Association of Nurserymen as to sizes and form.
2. All plants shall conform to the measurements specified in the planting list, except that plants larger than those specified may be used if approve by the Landscape Architect.
3. All plants shall be nursery-grown in accordance with good horticultural practices and shall be grown under climate conditions similar to those in the project locality for at least two years.
4. Balled and burlapped plants (B&B) shall be moved with the root systems as solid units. The balls shall be firmly wrapped with burlap.
5. Planting soil

A. Planting soil shall be mixture of 2/3 topsoil and 1/3 peat moss by volume.
B. Planting soil shall have a pH value range of 5.5 to 7.0. If planting soil does not fall within required pH range, limestone or aluminum sulfate shall be added to bring the pH within the specified limits.

6. Planting beds to receive 3-inch depth of shredded bark mulch over weed check fabric unless otherwise noted on plan.
7. All plant material shall be guaranteed for one full growing season (one year) after installation.
8. All areas disturbed during construction not designated to receive other treatment shall be loamed to a minimum depth of 4" and seeded in accordance with the following.

A. Incorporate ground limestone into all areas to be seeded at a rate of 50 LBS/1,000 S.F.
B. Apply 10-6-4 fertilizer to all areas to be seeded at a rate of 20 LBS/1,000 S.F.
C. Thoroughly incorporate lime and fertilizer into seed bed to depth of 3" by discing or other approved method.
D. Seed with the following mixture, applied at a rate of 10 LBS/1,000 S.F.

Seed Mix

Name of seed	% by weight in mixture	Minimum % purity	Minimum % germination
Pos Pratensis "Baron" Baron Bluegrass	50	90	75
Festuca Rubra "Pennlawn" Pennlawn Fescue	25	95	85
Lolium Perenne "Pennfine" Pennfine	25	98	95

E. Mulch all seeded areas with straw or salt hay at a rate of 50 LBS/1,000 S.F.
F. All slopes of 3:1 or greater after being loamed, seeded and mulched in accordance with the above shall secured with jute or degradable tobacco netting. Overlap all netting joints a minimum of 4" and secure with a double row of staples.

9. Sod may be used as an alternate on all areas shown to be loamed and seeded, if requested by owner.

GENERAL EROSION CONTROL GUIDELINES

1. All areas that are disturbed during grading operations which will not receive bituminous concrete will be covered with 6" of loam, seed and be covered with tobacco netting.
2. Erosion control measures shall be incorporated in the sequence of construction to prevent sediment laden water from leaving the site.
3. Natural vegetation shall be retained whenever feasible up to the scheduled start of construction activity in the area. Where possible, clearing shall immediately precede construction activity.
4. Areas subject to erosion shall be minimized in terms of time and area.
5. In general, work requiring erosion control includes excavations, fills, drainage, swales, and ditches, rough and finish grading, and stockpiling of earth.
6. Erosion control measures shall, where applicable, incorporate at least the following procedures detailed on this drawing
   A. Temporary barrier of silt sack to prevent sediment-laden water from entering storm drainage systems.
   B. Temporary barrier of hay bales to act as erosion checks at the toes of embankments and slopes.
   C. Temporary earth berms to act as sediment traps in areas of extreme runoff.
   D. Temporary erosion checks in ditches and swales to prevent sediment-laden water from entering bodies of surface water.
   E. Provide temporary slope erosion control where required.
   F. Fill and grading shall be treated with slope stabilization seeding and hay mulch upon completion.
7. Additional erosion control measures shall be incorporated as directed by the Engineer or Environmental Professional when the existing measures are adequate.
8. Erosion control measures shall be maintained until finished grade is stabilized, erosion control measures shall then be removed after all disturbed areas are stabilized with a thick cover of grass or adequate surface treatment as noted on these plans and specifications.
9. Following completion of subdivision road and associated site work, all sesequent lot site work shall incorporate appropriate erosion BMPs to prevent sediment from leaving the individual lots and/or entering the storm sewer system.

STORMWATER MANAGEMENT SYSTEM MAINTENANCE:

Operation and maintenance of stormwater management system will be the responsibility of the owner/operator of the facility.

Detention basin will be inspected biweekly for the first three months of operation or until vegetation has become well established, following this period, the basin will be inspected semiannually for slope and base integrity, vegetative cover and sedimentation.

The infiltration basin vegitation/grass will be trimmed at least twice per year, leaving 3" of vegetation for efficient trapping of suspended solids.

Semi-annual (twice a year) pavement sweeping shall occur, in the months of May and October of each year.

Sedimentation shall be removed infiltration basin on as needed basis, once a year or more frequent depending on the accumulated siltation.

Sedimentation removed will be properly disposed of outside any drainage facilities or resource areas, including buffer zone to the resource area.

GENERAL LEGEND

REF.	REFERENCE		WELL		GUY WIRE
N/F	NOW OR FORMERLY		FIRE HYDRANT		UTILITY POLE
D & L	DEED AND LAID OUT		POST INDICATOR VALVE WITH HOSE CONNECTION		GUY POLE
BIT.	BITUMINOUS CONCRETE		POST INDICATOR VALVE		LIGHT POLE
CONC.	CONCRETE		FIRE ALARM BOX		ELECTRIC METER
	TEMPORARY BENCHMARK		WATER METER		ELECTRICAL MANHOLE
	IRON PIN/PIPE FOUND		WATER MANHOLE		TELEPHONE MANHOLE
	IRON PIN TO BE SET		WATER GATE		TELEPHONE BOX
	FOUND MONUMENT		STORM SEWER MANHOLE		ELECTRICAL BOX MANHOLE
	SET MONUMENT		VENT PIPE		SANITARY SEWER MANHOLE
	CALCULATED POINT		CULVERT INVERT		GAS METER
	BOLLARD		FLOOR DRAIN		GAS GATE
	MAIL BOX		DROP INLET		MANHOLE
	MONITORING WELL		CURB INLET		
	TEST PIT BORING HOLE		CATCH BASIN		LEACH FIELD AREA
	PERCOLATION TEST				BUILDING LOCATION
	BORING, P-1				

R&D - REMOVE AND DISCARD
R&R - REMOVE AND RESET
R&S - REMOVE AND STACK
BIT. CONC. - BITUMINOUS CONCRETE
TYP. - TYPICAL
L.P. - LOW POINT
H.P. - HIGH POINT
S = SLOPE

	LOCUS PROPERTY LINE	OHU	OVERHEAD UTILITY LINES
	APPROXIMATE ADJOINERS PROPERTY LINE	S	SANITARY SEWER LINE
	RIGHT OF WAY LINE	D	STORM SEWER LINE
	INTERIOR LOT LINES	G	GAS LINE
	SETBACK LINE	W	WATER LINE
	EDGE OF CONCRETE	E	ELECTRICAL LINE
	EDGE OF PAVEMENT	O	CHAIN LINK FENCE
	5' CONTOUR INTERVAL	x	WIRE FENCE
	1' CONTOUR INTERVAL		STOCKADE FENCE
			TREE LINE

HUNTLEY
HUNTLEY ASSOCIATES, P.C.
SURVEYORS ENGINEERS LANDSCAPE ARCHITECTS
30 INDUSTRIAL DRIVE EAST
NORTHAMPTON, MASSACHUSETTS 01060

CONSTRUCTION NOTES AND LEGEND

COMMONWEALTH OF MASSACHUSETTS
MARK A. MOCLUSKY
No. 41747
REGISTERED PROFESSIONAL ENGINEER
4/3/05

SURVEYOR:	PRL
FIELD WORK:	PC/RY
ENGINEER:	TR
DESIGN:	TR
COMPS:	
DRAFTING:	JSM, TB
CHECKED:	MAM
HORIZ SCALE:	NA
VERT SCALE:	

THE RIDGE
DEFINITIVE SUBDIVISION PLAN
IN
NORTHAMPTON, MASSACHUSETTS
PREPARED FOR
SOVEREIGN BUILDERS, INC.

PROJECT NO:	03-179
DRAWING NO:	179 SP
DATE:	9/2/04
SHEET NO.	2 OF 15

W:\03-179\dwg\03-179 SP.dwg, 04/07/05 10:50:20 AM

5/31/05 PB 205 pg 73

NOTES:

1. A FIELD SURVEY WAS PERFORMED ON JUNE 2003 BY HUNTLEY ASSOCIATES, P.C.
2. HORIZONTAL DATUM: (NAD83 MASSACHUSETTS MAINLAND STATE PLANE COORDINATE SYSTEM) WAS ESTABLISHED USING G.P.S. CONTROL AS PERFORMED BY THIS OFFICE ON AUGUST 4, 2004.
3. VERTICAL DATUM WAS ESTABLISHED USING A BENCH MARK OBTAINED FROM THE ROUTE 66 RECONSTRUCTION PROJECT. PK NAIL FOUND CENTER LINE STA. 18+15.18 ELEV.=396.76 (NGVD 29).
4. TOPOGRAPHY AS TAKEN FROM THE CITY OF NORTHAMPTON TOPOGRAPHIC MAPS DATED 1965, USGS MAPS AND FROM A PHYSICAL SURVEY PERFORMED BY THIS OFFICE.
5. PERIMETER PROPERTY LINE WAS TAKEN FROM A PLAN ENTITLED "LAND IN NORTHAMPTON, MASS BELONGING TO CHARLES D. & GEORGIA E. MacINNIS" PREPARED BY GORDON E. AINSWORTH & ASSOCIATES. DATED DECEMBER 1964 & REVISED JANUARY 25, 1965.
6. WETLAND DELINEATION BY CHARLES H. DAUCHY, ENVIRONMENTAL CONSULTANT AND FIELD LOCATED BY THIS OFFICE.
7. LOCATION OF UTILITIES SHOWN HEREON ARE THE RESULT OF SURFACE EVIDENCE AS LOCATED BY FIELD SURVEY, PLANS OF RECORD, INFORMATION FURNISHED BY THE RESPECTIVE UTILITY COMPANIES, AND OTHER AVAILABLE SOURCES. THIS PLAN DOES NOT NECESSARILY DEPICT THE EXACT LOCATION OF ALL UTILITIES WHICH MAY EXIST AT THIS TIME WITHIN THE PREMISES SURVEYED. LOCATIONS SHOULD BE VERIFIED BY THE RESPECTIVE UTILITY COMPANY BEFORE BEING RELIED UPON. CONTACT DIG-SAFE AT 1-888-DIG-SAFE BEFORE EXCAVATION.
8. THE PREMISES SHOWN ARE SUBJECT TO AND/OR TOGETHER WITH THE BENEFITS OF ANY AND ALL EASEMENTS, RIGHTS, CONDITIONS, COVENANTS, AGREEMENTS, RESERVATIONS AND RESTRICTIONS OF RECORD.

REFERENCE PLANS:

1. "PLAN OF LAND PREPARED FOR RICHARD S. CERNAK NORTHAMPTON, MA" DATED MARCH 27, 1990 BY RICHARD J. LABARGE, SR. PLS
2. "LAND IN NORTHAMPTON, MASS BELONGING TO CHARLES D. & GEORGIA E. MacINNIS" DATED JAN. 5, 1965, REVISED JANUUARY 25, 1965 BY GORDON E. AINSWORTH & ASSOCIATES; AND RECORDED IN PLANBOOK 66

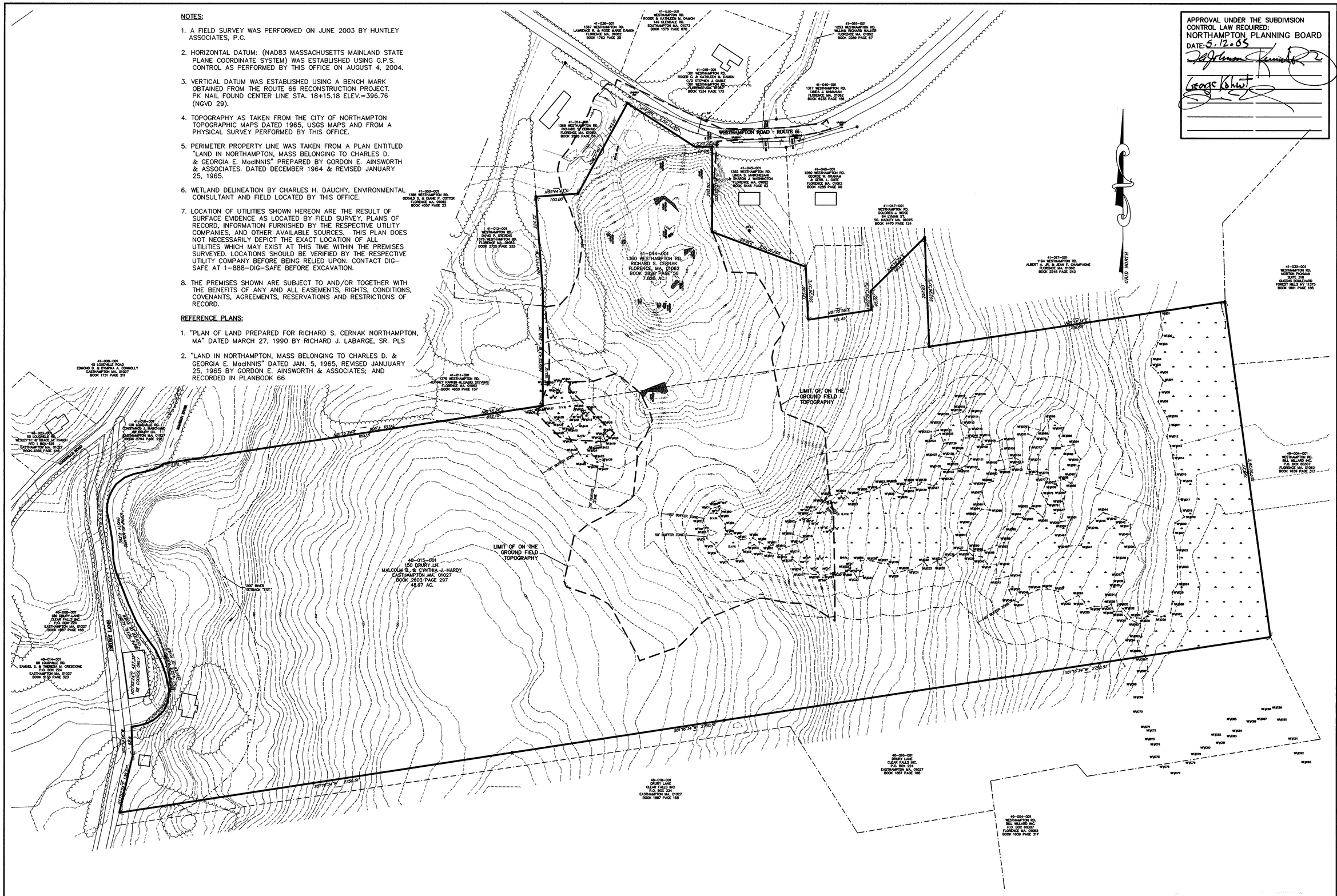

GRAPHIC SCALE

100 0 50 100 200 400

(IN FEET)
1 inch = 100 ft.

LEGEND

REF.	REFERENCE		WELL		GUY WIRE
N/F	NOW OR FORMERLY		FIRE HYDRANT		UTILITY POLE
D & L	DEED AND LAID OUT		POST INDICATOR VALVE WITH HOSE CONNECTION		GUY POLE
BIT.	BITUMINOUS CONCRETE				LIGHT POLE
CONC.	CONCRETE		POST INDICATOR VALVE		ELECTRIC METER
	5/8" REBAR TO BE SET		FIRE ALARM BOX		ELECTRICAL MANHOLE
	IRON PIN FOUND		WATER METER		TELEPHONE MANHOLE
			WATER MANHOLE		TELEPHONE BOX

HUNTLEY

HUNTLEY ASSOCIATES, P.C.
SURVEYORS ENGINEERS LANDSCAPE ARCHITECTS
30 INDUSTRIAL DRIVE EAST
NORTHAMPTON, MASSACHUSETTS 01060

EXISTING CONDITIONS
OVERALL VIEW

REV. 04/07/05
NAME CHANGED

COMMONWEALTH OF MASSACHUSETTS
PAUL R. LUSSIER
No. 29648
REGISTERED PROFESSIONAL ENGINEER
04/07/05

SURVEYOR:	PRL
FIELD WORK:	PC/RY
ENGINEER:	TR
DESIGN:	TR
COMPS:	
DRAFTING:	JSM, TB
CHECKED:	MAM
HORIZ SCALE:	1"=100'
VERT SCALE:	

THE RIDGE
DEFINITIVE SUBDIVISION PLAN
IN
NORTHAMPTON, MASSACHUSETTS
PREPARED FOR
SOVEREIGN BUILDERS, INC.

PROJECT NO:	03-179
DRAWING NO:	179 SP
DATE:	9/2/04
SHEET NO.	3 OF 15

5/31/05 PB 205 Pg 74

APPROVAL UNDER THE SUBDIVISION CONTROL LAW REQUIRED:
NORTHAMPTON PLANNING BOARD
DATE: 5.12.05

ZONING SUMMARY CHART
ZONING DISTRICT RR-RURAL RESIDENTIAL

Zoning Regulation Requirements Open Space Residential Development*	Required
MIN. OPEN SPACE	75%
MIN. LOT SIZE	10,000 S.F.
FRONTAGE	85 FT.
MINIMUM SETBACK FRONT SIDE REAR	 30 FT. 15 FT. 30 FT.
MIN. LOT DEPTH	110 FT.
MAX. BUILDING HEIGHT	35 FT.

* SINGLE FAMILY HOMES

LAND USE CALCULATIONS

MAXIMUM ALLOWABLE UNITS:

TOTAL PARCEL AREA (TWO PARCELS) = 56.80 AC.
OUT PARCEL LAND = 5.00 AC.
TOTAL PROJECT AREA = 51.80 AC.
RIGHT-OF-WAY = 1.67 AC.
WETLANDS = 7.79 AC.
FLOOD PLAIN = 0.95 AC.

ALLOWABLE UNITS = 51.80 AC. – 0.61 AC. – 0.90(7.79 AC. + 0.95 AC.) = 43.32 AC.
= 0.54 (43.32 AC.) = 23.39 = 23 UNITS

PROPOSED PROJECT = 13 UNITS

OPEN SPACE CALCULATIONS:

TOTAL TRACT AREA = 51.80 AC.

AREAS NOT CREDITED TOWARD OPEN SPACE CALCULATION:

- RIGHT-OF-WAY = 1.67 AC.
- OSR LOTS (1–13) = 13.46 AC.
- ASSOCIATION LOTS (1a, 1b, 6a) = 0.34 AC.
- WETLAND/FLOODPLAIN LESS 25% ALLOWANCE= [8.74 – 0.04(LOT 7)–0.02(LOT8)] – (15.62 x 0.25) = 4.77 AC.
- STEEP SLOPES > 8–20% = 14.69 AC.
- STEEP SLOPES > 20% = 1.09 AC.

TOTAL NON-CREDITED OPEN SPACE = 36.02 AC.

TOTAL TRACT AREA MINUS NON-CREDITED WETLANDS/FLOODPLAIN AND SLOPES > 8% = 31.24 AC.
MINIMUM OPEN SPACE REQUIRED = (50% x 31.24) = 15.62 AC.

CREDITED OPEN SPACE AREAS
- AREA OF LAND WITH SLOPES 0–8% = 12.21 AC.
- 25% OPEN SPACE ALLOWED WITHIN WETLANDS/FLOODPLAIN AND SLOPES > 8% = 3.91 AC.

TOTAL CREDITED OPEN SPACE = 12.21 AC. + 3.91 AC. = 16.12 AC.

% OF CREDITED OPEN SPACE TO CALCULATED TOTAL TRACT = 16.12 AC./31.24 AC. = 52%

THEREFORE; 15.62 AC. < 16.12 AC. O.K.

NOTE: 1. FLOOD PLAIN WAS DERIVED FROM THE NATIONAL FLOOD INSURANCE PROGRAM, FLOOD INSURANCE RATE MAP COMMUNITY-PANEL #250167 0001 A.

LEGEND

REF.	REFERENCE
N/F	NOW OR FORMERLY
D & L	DEED AND LAID OUT
BIT.	BITUMINOUS CONCRETE
CONC.	CONCRETE
●	5/8" REBAR TO BE SET
○	IRON PIN FOUND
□	FOUND MONUMENT
■	SET MONUMENT
▲	CALCULATED POINT
○	BOLLARD
MB	MAIL BOX
MW	MONITORING WELL
TP	TEST PIT
	PARKING METER
	WELL
	FIRE HYDRANT
	POST INDICATOR VALVE WITH HOSE CONNECTION
	POST INDICATOR VALVE
	FIRE ALARM BOX
	WATER METER
	WATER MANHOLE
	WATER GATE
	STORM SEWER MANHOLE
	VENT PIPE
	CULVERT INVERT
	FLOOR DRAIN
	DROP INLET
	CURB INLET
	CATCH BASIN
	GUY WIRE
	UTILITY POLE
	GUY POLE
	LIGHT POLE
	ELECTRIC METER
	ELECTRICAL MANHOLE
	TELEPHONE MANHOLE
	TELEPHONE BOX
	ELECTRICAL BOX MANHOLE
	SANITARY SEWER MANHOLE
	GAS METER
	GAS GATE

	LOCUS PROPERTY LINE	OHU	OVERHEAD UTILITY LINES
	APPROXIMATE ADJOINERS PROPERTY LINE	S	SANITARY SEWER LINE
	RIGHT OF WAY LINE	D	STORM SEWER LINE
	INTERIOR LOT LINES	G	GAS LINE
	EASEMENT LINES	W	WATER LINE
	CENTER OF PAVEMENT	E	ELECTRICAL LINE
	EDGE OF PAVEMENT	o	CHAIN LINK FENCE
	5' CONTOUR INTERVAL	x	WIRE FENCE
	1' CONTOUR INTERVAL		STOCKADE FENCE
			TREE LINE

	LEACH FIELD AREA
	BUILDING LOCATION
	SLOPES 0–8%
	STEEP SLOPES >20%
	FLOOD PLAIN AREA
	LEDGE OUTCROP

GRAPHIC SCALE
100 0 50 100 200 400
(IN FEET)
1 inch = 100 ft.

HUNTLEY
HUNTLEY ASSOCIATES, P.C.
SURVEYORS ENGINEERS LANDSCAPE ARCHITECTS
30 INDUSTRIAL DRIVE EAST
NORTHAMPTON, MASSACHUSETTS 01060

OVERALL LOT LAYOUT

REV. Trails 11/8/04
REV. Trails 12/8/04
REV. Trails 1/8/05
REVISED 02/04/05
REV. PB COND. 3/3/05
REV. 04/07/05
NAME CHANGED

COMMONWEALTH OF MASSACHUSETTS
PAUL R. LUSSIER
No. 26848
PROFESSIONAL LAND SURVEYOR
Paul 04/07/05

SURVEYOR:	PRL
FIELD WORK:	PC/RY
ENGINEER:	TR
DESIGN:	TR
COMPS:	
DRAFTING:	JSM, TB
CHECKED:	MAM
HORIZ SCALE:	1"=100'
VERT SCALE:	

THE RIDGE
DEFINITIVE SUBDIVISION PLAN
IN
NORTHAMPTON, MASSACHUSETTS
PREPARED FOR
SOVEREIGN BUILDERS, INC.

PROJECT NO:	03-179
DRAWING NO:	179 SP
DATE:	9/2/04
SHEET NO.	4 OF 15

5/31/05 PB 205 pg 75

APPROVAL UNDER THE SUBDIVISION CONTROL LAW REQUIRED:
NORTHAMPTON PLANNING BOARD
DATE: 5-12-05

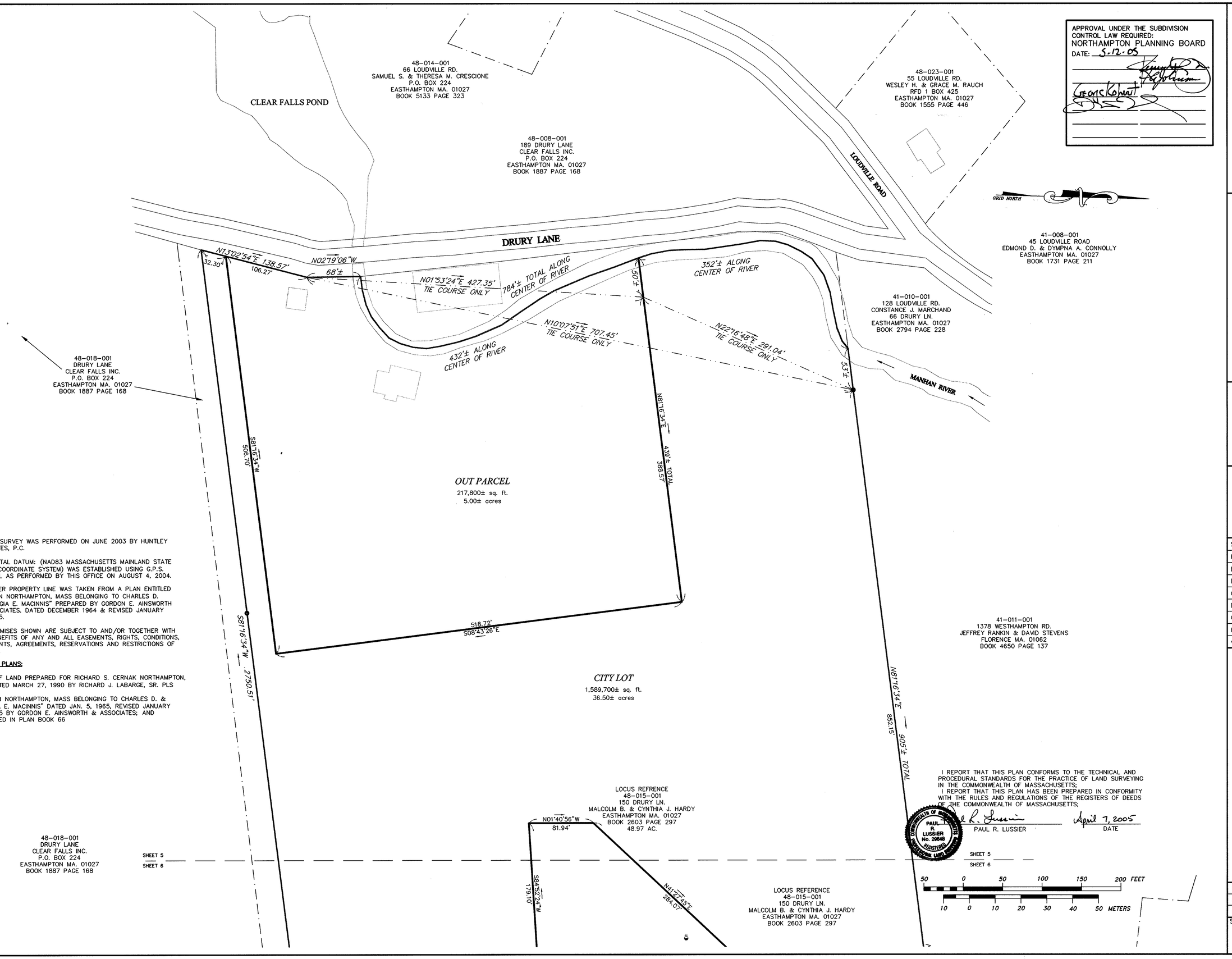

NOTES:

1. A FIELD SURVEY WAS PERFORMED ON JUNE 2003 BY HUNTLEY ASSOCIATES, P.C.
2. HORIZONTAL DATUM: (NAD83 MASSACHUSETTS MAINLAND STATE PLANE COORDINATE SYSTEM) WAS ESTABLISHED USING G.P.S. CONTROL AS PERFORMED BY THIS OFFICE ON AUGUST 4, 2004.
3. PERIMETER PROPERTY LINE WAS TAKEN FROM A PLAN ENTITLED "LAND IN NORTHAMPTON, MASS BELONGING TO CHARLES D. & GEORGIA E. MACINNIS" PREPARED BY GORDON E. AINSWORTH & ASSOCIATES. DATED DECEMBER 1964 & REVISED JANUARY 25, 1965.
4. THE PREMISES SHOWN ARE SUBJECT TO AND/OR TOGETHER WITH THE BENEFITS OF ANY AND ALL EASEMENTS, RIGHTS, CONDITIONS, COVENANTS, AGREEMENTS, RESERVATIONS AND RESTRICTIONS OF RECORD.

REFERENCE PLANS:

1. "PLAN OF LAND PREPARED FOR RICHARD S. CERNAK NORTHAMPTON, MA" DATED MARCH 27, 1990 BY RICHARD J. LABARGE, SR. PLS
2. "LAND IN NORTHAMPTON, MASS BELONGING TO CHARLES D. & GEORGIA E. MACINNIS" DATED JAN. 5, 1965, REVISED JANUARY 25, 1965 BY GORDON E. AINSWORTH & ASSOCIATES; AND RECORDED IN PLAN BOOK 66

I REPORT THAT THIS PLAN CONFORMS TO THE TECHNICAL AND PROCEDURAL STANDARDS FOR THE PRACTICE OF LAND SURVEYING IN THE COMMONWEALTH OF MASSACHUSETTS;
I REPORT THAT THIS PLAN HAS BEEN PREPARED IN CONFORMITY WITH THE RULES AND REGULATIONS OF THE REGISTERS OF DEEDS OF THE COMMONWEALTH OF MASSACHUSETTS;

COMMONWEALTH OF MASSACHUSETTS — PAUL R. LUSSIER No. 20548 — REGISTERED PROFESSIONAL LAND SURVEYOR

Paul R. Lussier — PAUL R. LUSSIER
April 7, 2005 — DATE

HUNTLEY

HUNTLEY ASSOCIATES, P.C.
SURVEYORS ENGINEERS LANDSCAPE ARCHITECTS
30 INDUSTRIAL DRIVE EAST
NORTHAMPTON, MASSACHUSETTS 01060

LOT LAYOUT (SCALED VIEW)

REVISED 02/04/05
REV. 04/07/05
NAME CHANGED

SURVEYOR:	PRL
FIELD WORK:	PC/RY
ENGINEER:	TR
DESIGN:	TR
COMPS:	
DRAFTING:	JSM,TB,RJR
CHECKED:	MAM,PRL
HORIZ SCALE:	1"=50'
VERT SCALE:	

THE RIDGE
DEFINITIVE SUBDIVISION PLAN
IN
NORTHAMPTON, MASSACHUSETTS
PREPARED FOR
SOVEREIGN BUILDERS, INC.

PROJECT NO:	03-179
DRAWING NO:	179 SP
DATE:	9/2/04
SHEET NO.	5 OF 15

5/31/05 PB 205 Pg 76

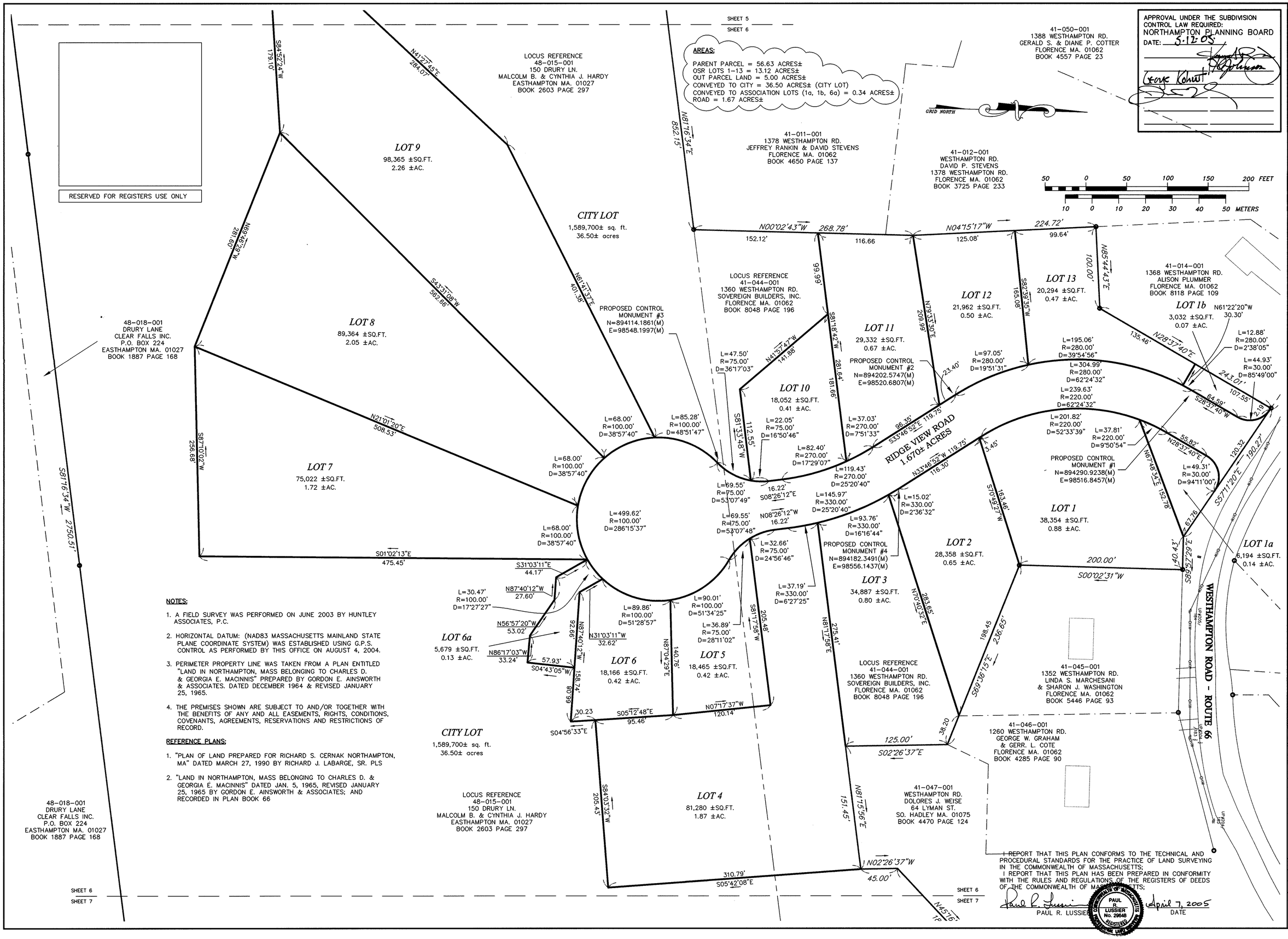

NOTES:

1. A FIELD SURVEY WAS PERFORMED ON JUNE 2003 BY HUNTLEY ASSOCIATES, P.C.
2. HORIZONTAL DATUM: (NAD83 MASSACHUSETTS MAINLAND STATE PLANE COORDINATE SYSTEM) WAS ESTABLISHED USING G.P.S. CONTROL AS PERFORMED BY THIS OFFICE ON AUGUST 4, 2004.
3. PERIMETER PROPERTY LINE WAS TAKEN FROM A PLAN ENTITLED "LAND IN NORTHAMPTON, MASS BELONGING TO CHARLES D. & GEORGIA E. MACINNIS" PREPARED BY GORDON E. AINSWORTH & ASSOCIATES. DATED DECEMBER 1964 & REVISED JANUARY 25, 1965.
4. THE PREMISES SHOWN ARE SUBJECT TO AND/OR TOGETHER WITH THE BENEFITS OF ANY AND ALL EASEMENTS, RIGHTS, CONDITIONS, COVENANTS, AGREEMENTS, RESERVATIONS AND RESTRICTIONS OF RECORD.

REFERENCE PLANS:

1. "PLAN OF LAND PREPARED FOR RICHARD S. CERNAK NORTHAMPTON, MA" DATED MARCH 27, 1990 BY RICHARD J. LABARGE, SR. PLS
2. "LAND IN NORTHAMPTON, MASS BELONGING TO CHARLES D. & GEORGIA E. MACINNIS" DATED JAN. 5, 1965, REVISED JANUARY 25, 1965 BY GORDON E. AINSWORTH & ASSOCIATES; AND RECORDED IN PLAN BOOK 66

I HEREBY CERTIFY THAT THIS PLAN CONFORMS TO THE TECHNICAL AND PROCEDURAL STANDARDS FOR THE PRACTICE OF LAND SURVEYING IN THE COMMONWEALTH OF MASSACHUSETTS;
I REPORT THAT THIS PLAN HAS BEEN PREPARED IN CONFORMITY WITH THE RULES AND REGULATIONS OF THE REGISTERS OF DEEDS OF THE COMMONWEALTH OF MASSACHUSETTS;

Paul R. Lussier — April 7, 2005
PAUL R. LUSSIER — DATE

COMMONWEALTH OF MASSACHUSETTS — PAUL R. LUSSIER No. 29648 — REGISTERED PROFESSIONAL LAND SURVEYOR

HUNTLEY

HUNTLEY ASSOCIATES, P.C.
SURVEYORS ENGINEERS LANDSCAPE ARCHITECTS
30 INDUSTRIAL DRIVE EAST
NORTHAMPTON, MASSACHUSETTS 01060

LOT LAYOUT (SCALED VIEW)

REVISED 10/13/04
REVISED 01/10/05
REVISED 02/04/05
REV. 04/07/05
NAME CHANGED

SURVEYOR:	PRL
FIELD WORK:	PC/RY
ENGINEER:	TR
DESIGN:	TR
COMPS:	
DRAFTING:	JSM,TB,RJR
CHECKED:	MAM,PRL
HORIZ SCALE:	1"=50'
VERT SCALE:	

THE RIDGE
DEFINITIVE SUBDIVISION PLAN
IN
NORTHAMPTON, MASSACHUSETTS
PREPARED FOR
SOVEREIGN BUILDERS, INC.

PROJECT NO:	03-179
DRAWING NO:	179 SP
DATE:	9/2/04
SHEET NO.	6 OF 15

5/31/05
PB 205 pg 77

RESERVED FOR REGISTERS USE ONLY

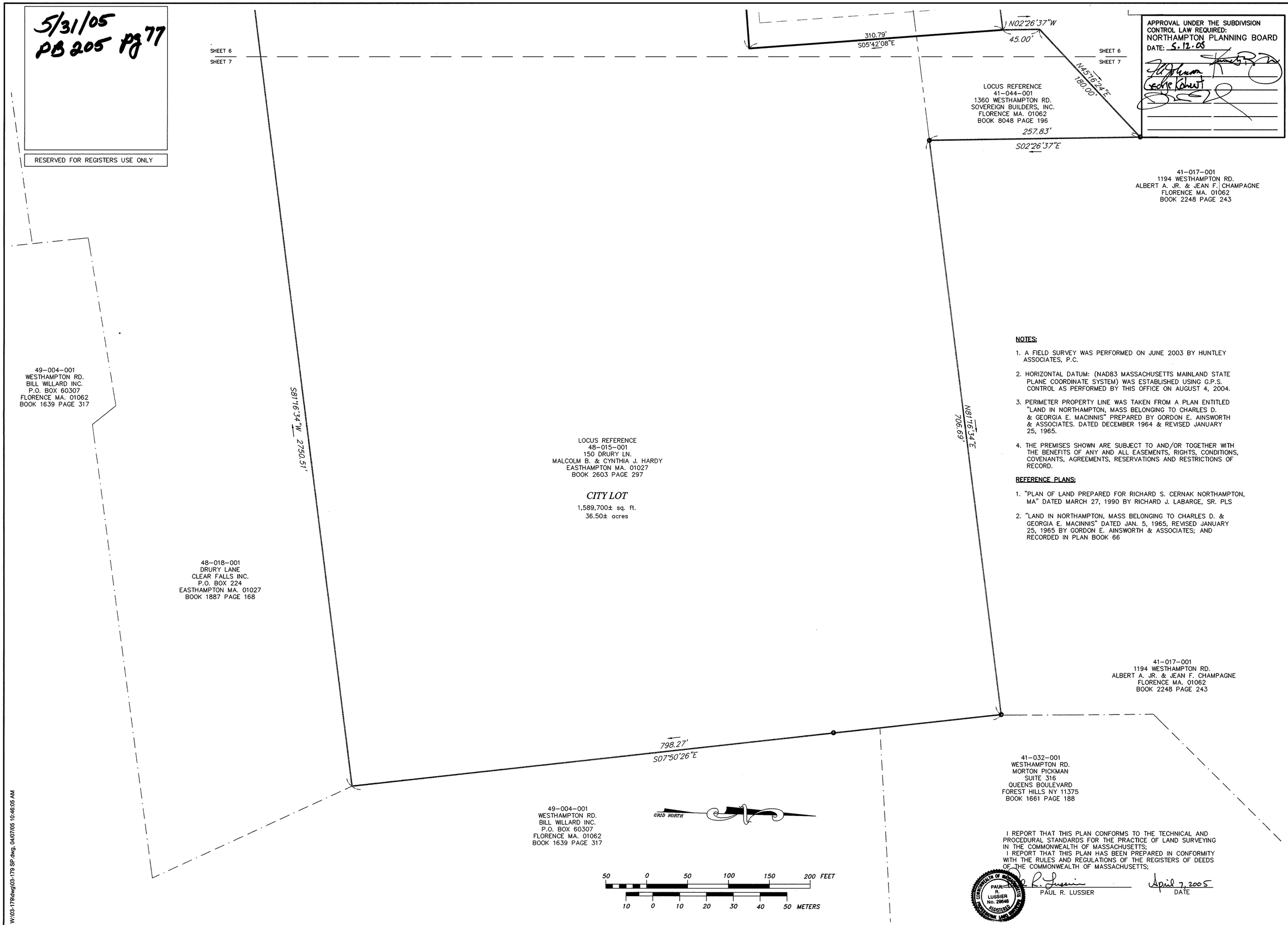

APPROVAL UNDER THE SUBDIVISION CONTROL LAW REQUIRED:
NORTHAMPTON PLANNING BOARD
DATE: 5.12.05

NOTES:

1. A FIELD SURVEY WAS PERFORMED ON JUNE 2003 BY HUNTLEY ASSOCIATES, P.C.
2. HORIZONTAL DATUM: (NAD83 MASSACHUSETTS MAINLAND STATE PLANE COORDINATE SYSTEM) WAS ESTABLISHED USING G.P.S. CONTROL AS PERFORMED BY THIS OFFICE ON AUGUST 4, 2004.
3. PERIMETER PROPERTY LINE WAS TAKEN FROM A PLAN ENTITLED "LAND IN NORTHAMPTON, MASS BELONGING TO CHARLES D. & GEORGIA E. MACINNIS" PREPARED BY GORDON E. AINSWORTH & ASSOCIATES. DATED DECEMBER 1964 & REVISED JANUARY 25, 1965.
4. THE PREMISES SHOWN ARE SUBJECT TO AND/OR TOGETHER WITH THE BENEFITS OF ANY AND ALL EASEMENTS, RIGHTS, CONDITIONS, COVENANTS, AGREEMENTS, RESERVATIONS AND RESTRICTIONS OF RECORD.

REFERENCE PLANS:

1. "PLAN OF LAND PREPARED FOR RICHARD S. CERNAK NORTHAMPTON, MA" DATED MARCH 27, 1990 BY RICHARD J. LABARGE, SR. PLS
2. "LAND IN NORTHAMPTON, MASS BELONGING TO CHARLES D. & GEORGIA E. MACINNIS" DATED JAN. 5, 1965, REVISED JANUARY 25, 1965 BY GORDON E. AINSWORTH & ASSOCIATES; AND RECORDED IN PLAN BOOK 66

I REPORT THAT THIS PLAN CONFORMS TO THE TECHNICAL AND PROCEDURAL STANDARDS FOR THE PRACTICE OF LAND SURVEYING IN THE COMMONWEALTH OF MASSACHUSETTS;
I REPORT THAT THIS PLAN HAS BEEN PREPARED IN CONFORMITY WITH THE RULES AND REGULATIONS OF THE REGISTERS OF DEEDS OF THE COMMONWEALTH OF MASSACHUSETTS;

COMMONWEALTH OF MASSACHUSETTS PAUL R. LUSSIER No. 29646 REGISTERED PROFESSIONAL LAND SURVEYOR

PAUL R. LUSSIER

April 7, 2005
DATE

HUNTLEY
HUNTLEY ASSOCIATES, P.C.
SURVEYORS ENGINEERS LANDSCAPE ARCHITECTS
30 INDUSTRIAL DRIVE EAST
NORTHAMPTON, MASSACHUSETTS 01060

LOT LAYOUT
(SCALED VIEW)

REVISED 02/04/05
REV. 04/07/05
NAME CHANGED

SURVEYOR:	PRL
FIELD WORK:	PC/RY
ENGINEER:	TR
DESIGN:	TR
COMPS:	
DRAFTING:	JSM,TB,RJR
CHECKED:	MAM, PRL
HORIZ SCALE:	1"=50'
VERT SCALE:	

THE RIDGE
DEFINITIVE SUBDIVISION PLAN
IN
NORTHAMPTON, MASSACHUSETTS
PREPARED FOR
SOVEREIGN BUILDERS, INC.

PROJECT NO:	03-179
DRAWING NO:	179 SP
DATE:	9/2/04
SHEET NO.	7 OF 15

W:\03-179\dwg\03-179 SP.dwg, 04/07/05 10:46:05 AM

5/31/05 PB 205 Pg 78

APPROVAL UNDER THE SUBDIVISION CONTROL LAW REQUIRED:
NORTHAMPTON PLANNING BOARD
DATE: 5.12.05

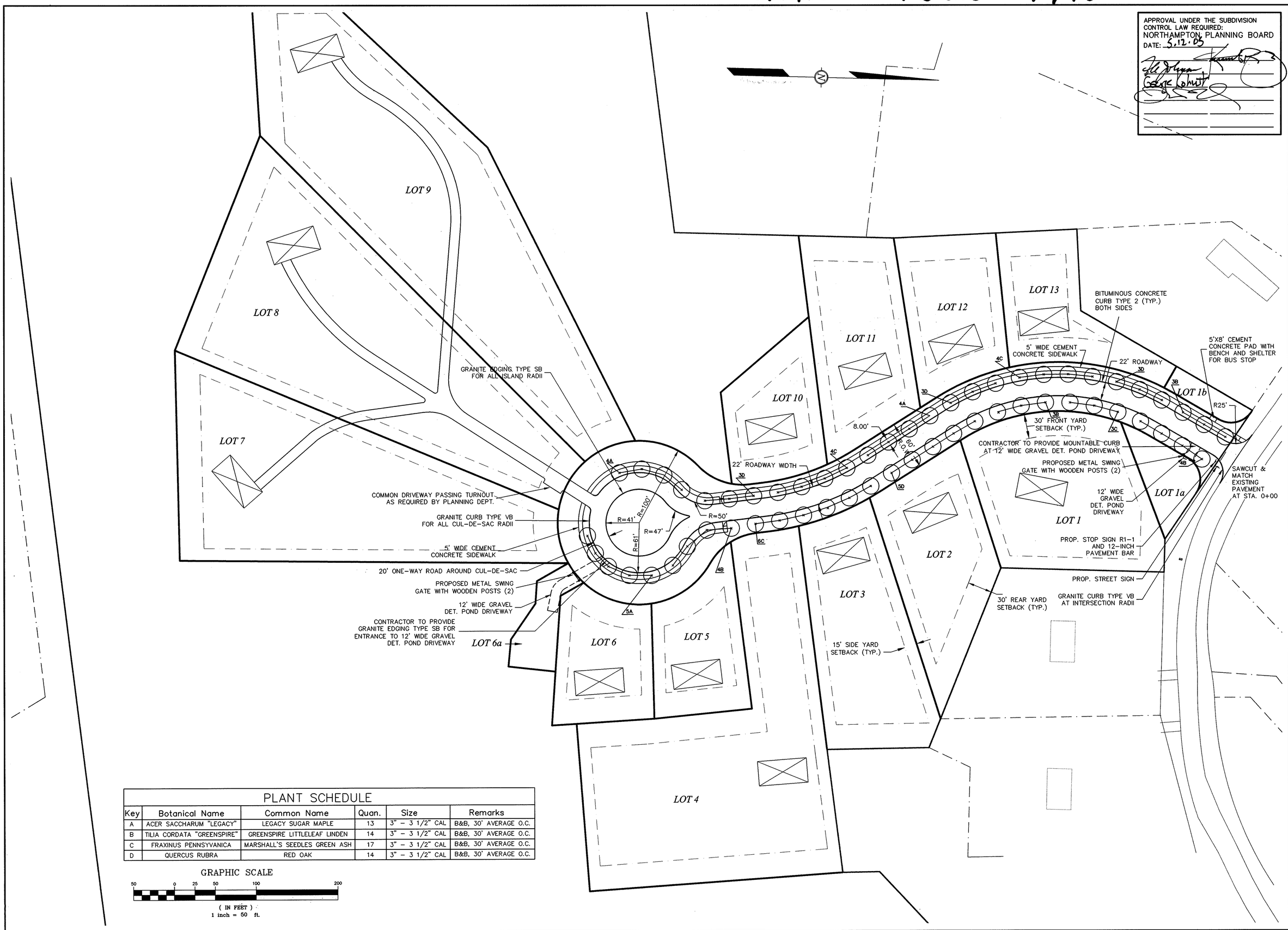

PLANT SCHEDULE

Key	Botanical Name	Common Name	Quan.	Size	Remarks
A	ACER SACCHARUM "LEGACY"	LEGACY SUGAR MAPLE	13	3" – 3 1/2" CAL	B&B, 30' AVERAGE O.C.
B	TILIA CORDATA "GREENSPIRE"	GREENSPIRE LITTLELEAF LINDEN	14	3" – 3 1/2" CAL	B&B, 30' AVERAGE O.C.
C	FRAXINUS PENNSYVANICA	MARSHALL'S SEEDLES GREEN ASH	17	3" – 3 1/2" CAL	B&B, 30' AVERAGE O.C.
D	QUERCUS RUBRA	RED OAK	14	3" – 3 1/2" CAL	B&B, 30' AVERAGE O.C.

GRAPHIC SCALE

50 0 25 50 100 200

(IN FEET)
1 inch = 50 ft.

HUNTLEY
HUNTLEY ASSOCIATES, P.C.
SURVEYORS ENGINEERS LANDSCAPE ARCHITECTS
30 INDUSTRIAL DRIVE EAST
NORTHAMPTON, MASSACHUSETTS 01060

LAYOUT AND MATERIALS PLAN

REVISED 01/10/05
REVISED 02/04/05
REV. PB COND. 3/3/05

COMMONWEALTH OF MASSACHUSETTS
MARK A. MCCLUSKY
CIVIL
No. 41747
REGISTERED PROFESSIONAL ENGINEER
4/7/05

SURVEYOR:	PRL
FIELD WORK:	PC/RY
ENGINEER:	TR
DESIGN:	TR
COMPS:	
DRAFTING:	JSM, TB
CHECKED:	MAM
HORIZ SCALE:	1"=50'
VERT SCALE:	

THE RIDGE
DEFINITIVE SUBDIVISION PLAN
IN
NORTHAMPTON, MASSACHUSETTS
PREPARED FOR
SOVEREIGN BUILDERS, INC.

PROJECT NO:	03-179
DRAWING NO:	179 SP
DATE:	9/2/04
SHEET NO.	8 OF 15

5/31/05 PB 205 Pg 79

APPROVAL UNDER THE SUBDIVISION CONTROL LAW REQUIRED:
NORTHAMPTON PLANNING BOARD
DATE: 5.12.05

LOT 9
LOT 8
LOT 7
LOT 6a
LOT 6
LOT 5
LOT 4
LOT 3
LOT 2
LOT 1
LOT 1a
LOT 10
LOT 11
LOT 12
LOT 13
LOT 16

SILT FENCE AND HAYBALES (TYPICAL)
100' BUFFER ZONE
50' BUFFER ZONE
BLAST AND REMOVE LEDGE OUTCROP TO LIMIT OF R.O.W.
PROPOSED ELECTRIC, GAS, TELEPHONE AND CABLE TV UTILITIES (TYPICAL)
20' HIGH, THREE HEAD 50 WATT HIGH PRESSURE SODIUM ARCHITECTURAL STREET LIGHT (TYPICAL)
DETENTION POND 1 WITH FOREBAY SEE DETAIL SHEET
DETENTION POND 2 WITH FOREBAY SEE DETAIL SHEET
NOTE: PROPOSED ELECTRIC, GAS, TELEPHONE AND CABLE TV UTILITIES INSTALLATION MUST MEET THE CITY OF NORTHAMPTON AND RESPECTIVE UTILITY COMPANY STANDARDS.
LEDGE OUTCROP
BIT. DRIVE
GRAVEL DRIVE
(4) MAIL BOXES

PROPOSED STORM SEWER INVERT SCHEDULE

FES1
INV =406.00

CS1
INV IN(WEIR)=409.00
INV IN(2X2)=409.50
INV OUT=406.25

FES2
INV (DMH1)=407.15

DMH1
RIM=410.5
INV IN(CB1)=407.55
INV IN(DMH2)=407.55
INV OUT=407.45

CB1
RIM=411.75
INV OUT=408.13

DMH2
RIM=413.1
INV IN(DMH3)=410.19
INV OUT=410.09

DMH3
RIM=421.5
INV IN(CB2)=419.09
INV IN(CB3)=419.09
INV OUT=418.99

CB2
RIM=421.9
INV OUT=419.18

CB3
RIM=421.9
INV OUT=419.18

CB4
RIM=423.2
INV OUT=420.20

CB5
RIM=423.2
INV OUT=420.20

DMH4
RIM=422.7
INV IN=419.72
INV OUT=419.62

DMH5
RIM=416.7
INV IN=413.69
INV OUT=413.59

FES3
INV (DMH5)=410.00

CB6
RIM=413.04
INV OUT=410.54

CB7
RIM=413.04
INV OUT=410.54

DMH6
RIM=413.28
INV IN(CB6)=4410.39
INV IN(CB7)=410.39
INV OUT=410.29

FES4
INV=410.00

CS2
INV IN(WEIR)=412.00
INV IN(2X2)=412.5
INV OUT=410.50

FES5
INV =410.00

GRAPHIC SCALE
50 0 25 50 100 200
(IN FEET)
1 inch = 50 ft.

HUNTLEY

HUNTLEY ASSOCIATES, P.C.
SURVEYORS ENGINEERS LANDSCAPE ARCHITECTS
30 INDUSTRIAL DRIVE EAST
NORTHAMPTON, MASSACHUSETTS 01060

GRADING, UTILITIES AND EROSION CONTROL PLAN

REV. TEARDROP 11/8/04
REVISED 02/04/05
REV. PB COND. 3/3/05

COMMONWEALTH OF MASSACHUSETTS
MARK A. MCCLURY
CIVIL
No. 34364
REGISTERED PROFESSIONAL ENGINEER
4/7/05

SURVEYOR:	PRL
FIELD WORK:	PC/RY
ENGINEER:	TR
DESIGN:	TR
COMPS:	
DRAFTING:	JSM, TB
CHECKED:	MAM
HORIZ SCALE:	1"=50'
VERT SCALE:	

THE RIDGE
DEFINITIVE SUBDIVISION PLAN
IN
NORTHAMPTON, MASSACHUSETTS
PREPARED FOR
SOVEREIGN BUILDERS, INC.

PROJECT NO:	03-179
DRAWING NO:	179 SP4
DATE:	9/2/04
SHEET NO.	9 OF 15

5/31/05 PB 205 PG 80

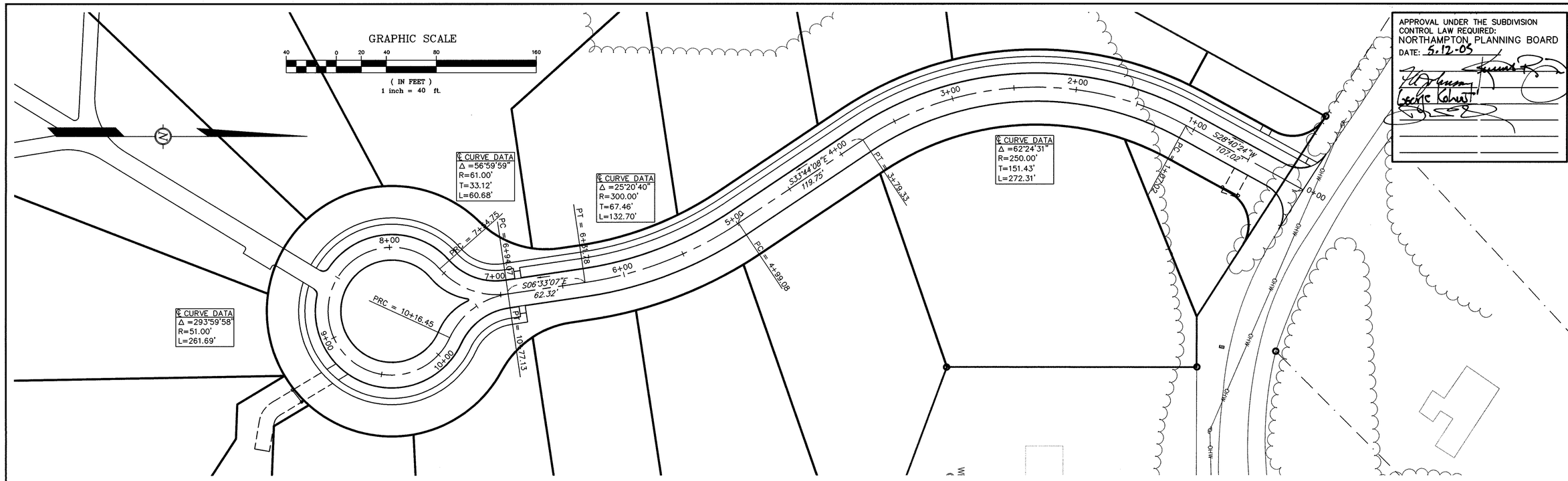

APPROVAL UNDER THE SUBDIVISION CONTROL LAW REQUIRED:
NORTHAMPTON PLANNING BOARD
DATE: 5-12-05

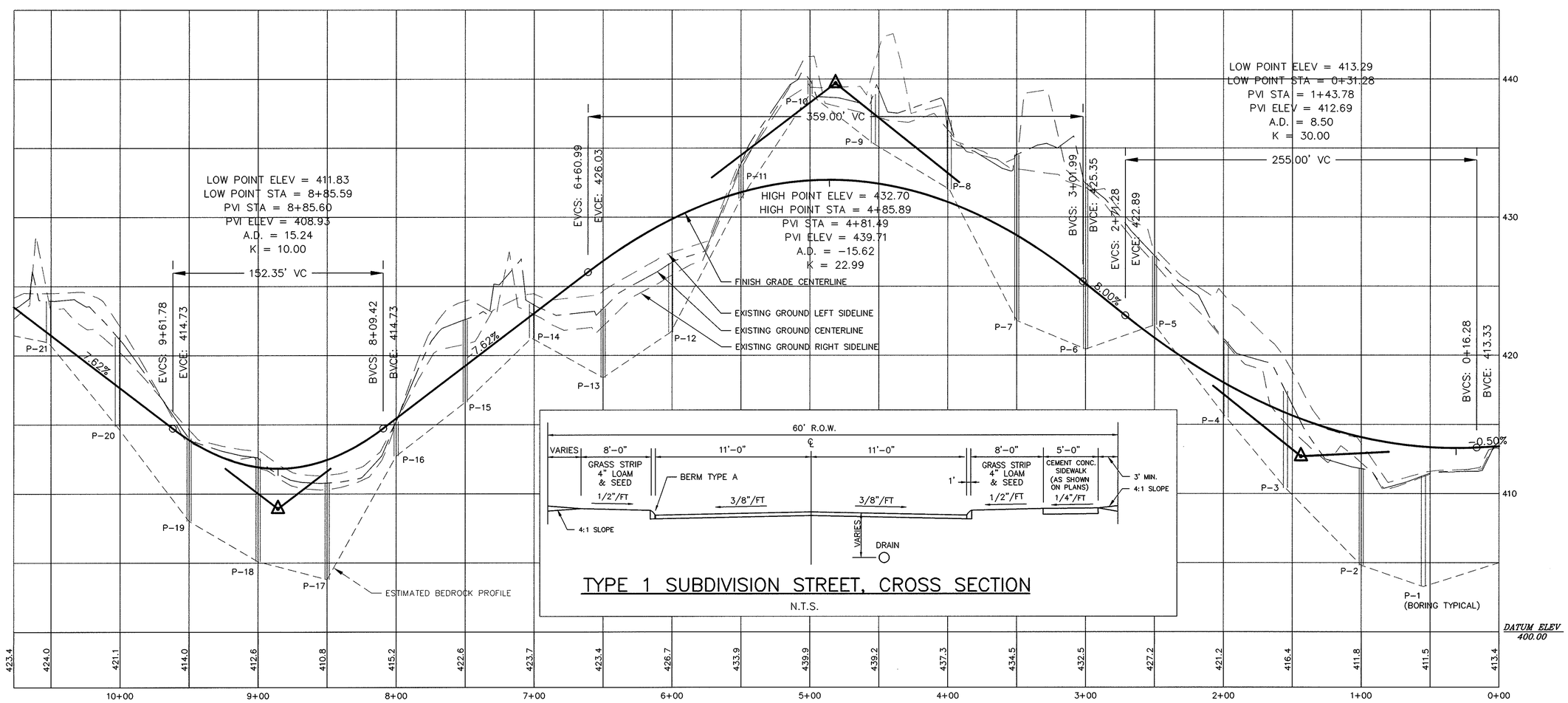

TYPE 1 SUBDIVISION STREET, CROSS SECTION

N.T.S.

HUNTLEY

HUNTLEY ASSOCIATES, P.C.
SURVEYORS ENGINEERS LANDSCAPE ARCHITECTS
30 INDUSTRIAL DRIVE EAST
NORTHAMPTON, MASSACHUSETTS 01060

ROADWAY PLAN & PROFILE

REVISED 01/10/05

COMMONWEALTH OF MASSACHUSETTS
MARK A. MCCULLOUGH
CIVIL
NO. 41747
REGISTERED PROFESSIONAL ENGINEER
4/3/05

SURVEYOR:	PRL
FIELD WORK:	PC/RY
ENGINEER:	TR
DESIGN:	TR
COMPS:	
DRAFTING:	JSM, TR
CHECKED:	MAM
HORIZ SCALE:	1"=40'
VERT SCALE:	1"=4'

THE RIDGE
DEFINITIVE SUBDIVISION PLAN
IN
NORTHAMPTON, MASSACHUSETTS
PREPARED FOR
SOVEREIGN BUILDERS, INC.

PROJECT NO:	03-179
DRAWING NO:	03-179 SP
DATE:	9/2/04
SHEET NO.	10 OF 15

5/31/05 PB205 Pg 81

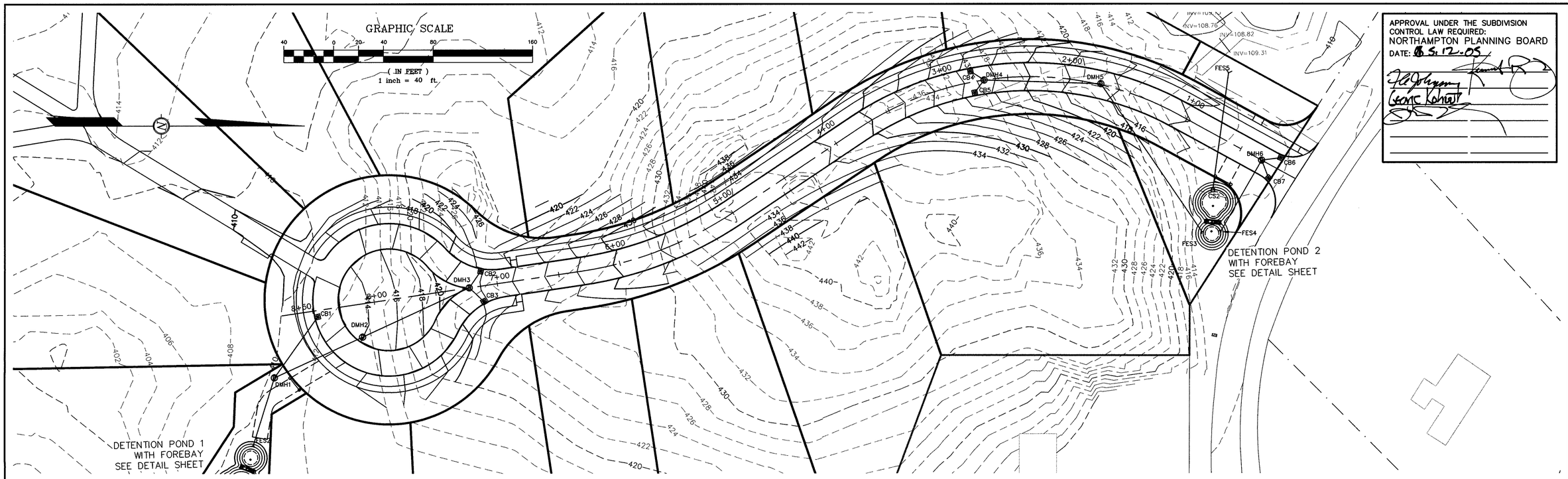

APPROVAL UNDER THE SUBDIVISION CONTROL LAW REQUIRED:
NORTHAMPTON PLANNING BOARD
DATE: 5-12-05

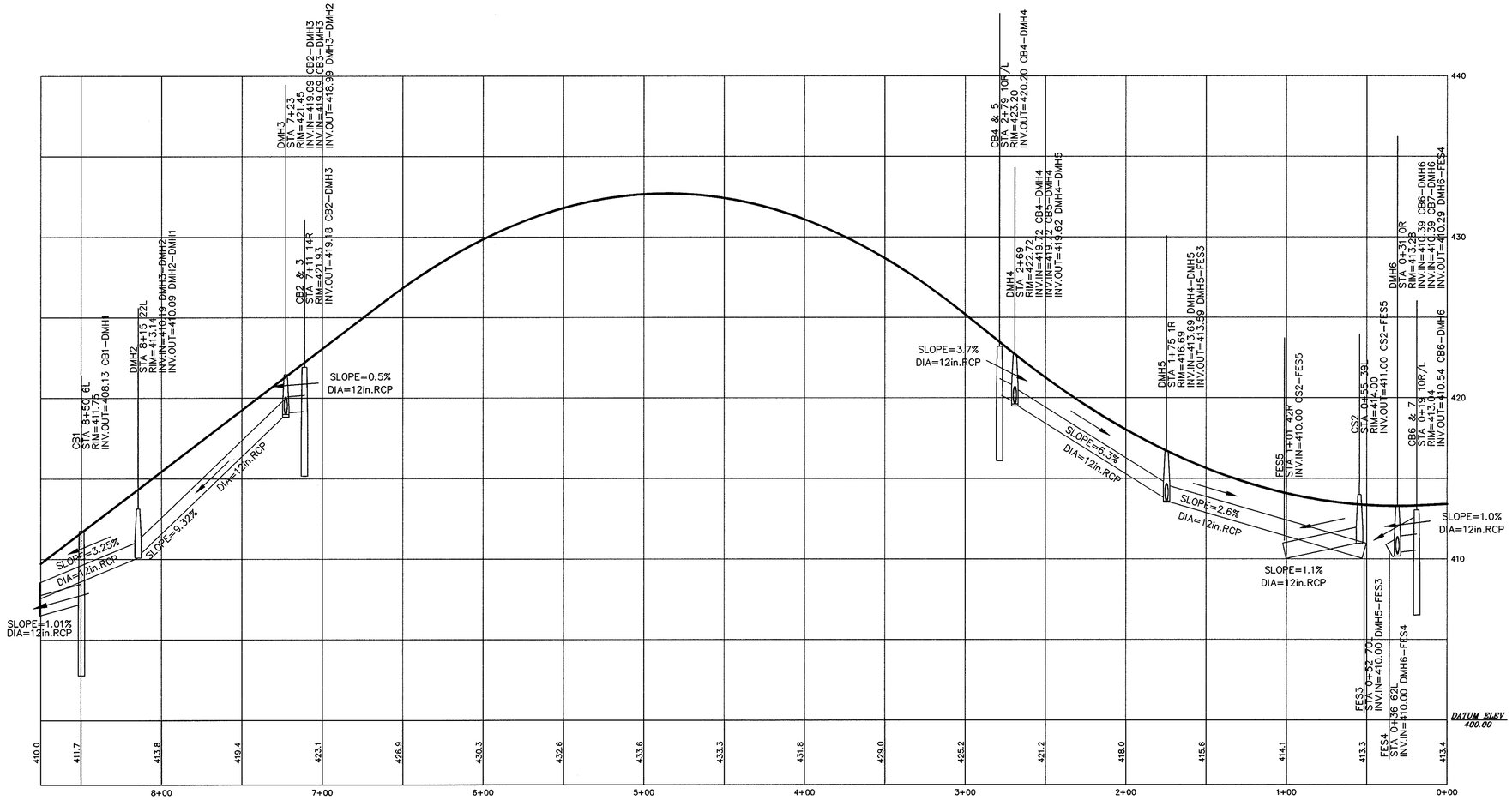

HUNTLEY

HUNTLEY ASSOCIATES, P.C.
SURVEYORS ENGINEERS LANDSCAPE ARCHITECTS
30 INDUSTRIAL DRIVE EAST
NORTHAMPTON, MASSACHUSETTS 01060

DRAINAGE PLAN & PROFILE

REVISED 01/10/05

COMMONWEALTH OF MASSACHUSETTS
MARK A. MCCLUSKY
CIVIL
NO. 41747
REGISTERED PROFESSIONAL ENGINEER
4/7/05

SURVEYOR:	PRL
FIELD WORK:	PC/RY
ENGINEER:	TR
DESIGN:	TR
COMPS:	
DRAFTING:	JSM, TR
CHECKED:	MAM
HORIZ SCALE:	1"=40'
VERT SCALE:	1"=4'

THE RIDGE
DEFINITIVE SUBDIVISION PLAN
IN
NORTHAMPTON, MASSACHUSETTS
PREPARED FOR
SOVEREIGN BUILDERS, INC.

PROJECT NO:	03-179
DRAWING NO:	03-179 SP
DATE:	9/2/04
SHEET NO.	11 OF 15

5/31/05 PB 205 Pg 82

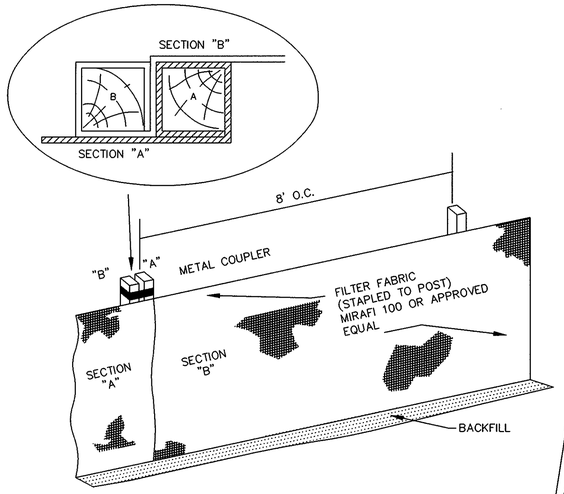

TEMPORARY SILTATION BARRIER

N.T.S.

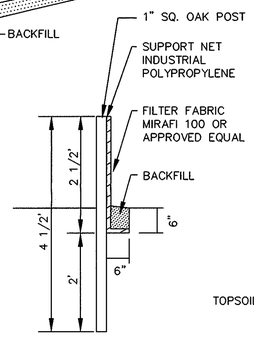

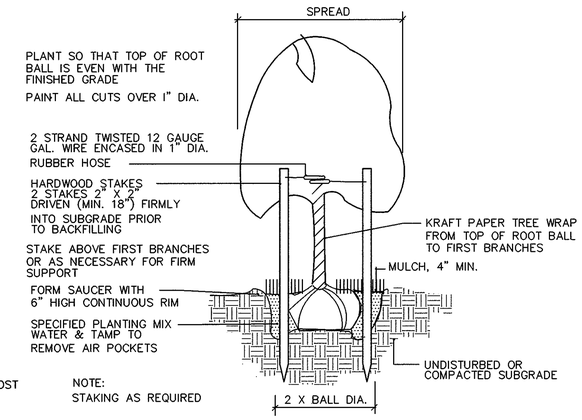

TREE PLANTING – VERTICAL STAKES

N.T.S.

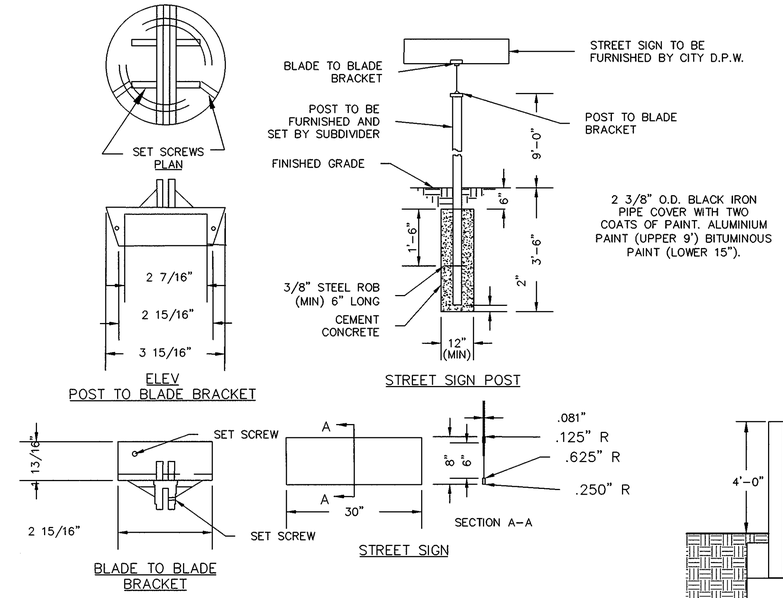

STREET SIGN POST

N.T.S.

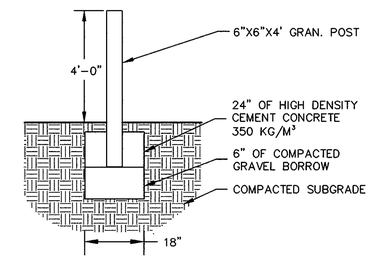

GRANITE BOLLARD POST

N.T.S.

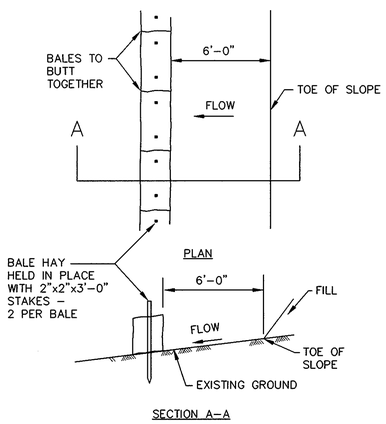

BALED HAY FOR EROSION CONTROL AT TOP OR TOE OF PROPOSED SLOPES

N.T.S.

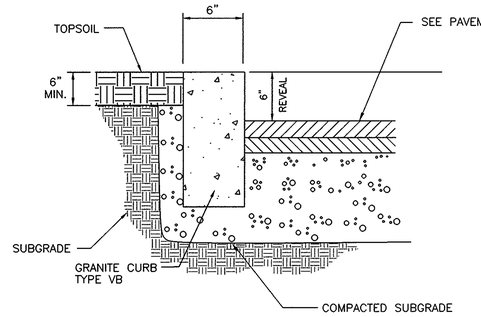

TYPICAL SECTION – CURB GRANITE CURB

N.T.S.

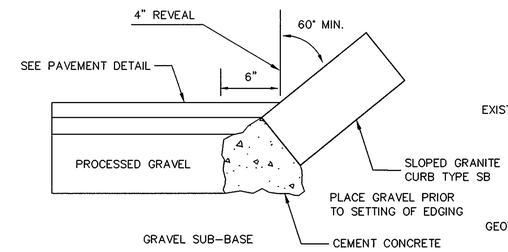

SLOPED GRANITE CURB

N.T.S.

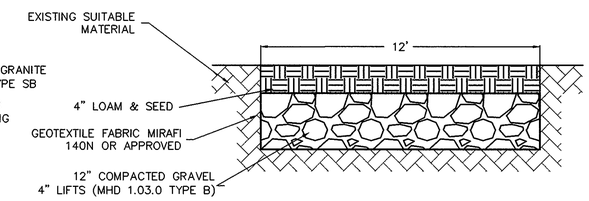

DETENTION BASIN GRAVEL ACCESS ROAD

N.T.S.

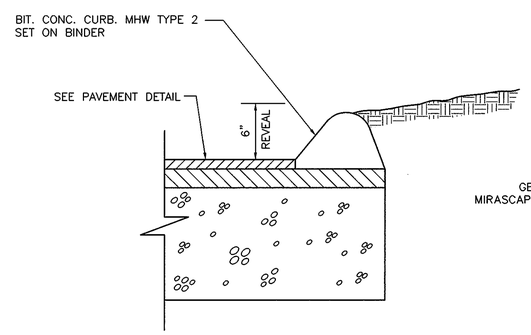

BITUMINOUS CONCRETE CURBING

N.T.S.

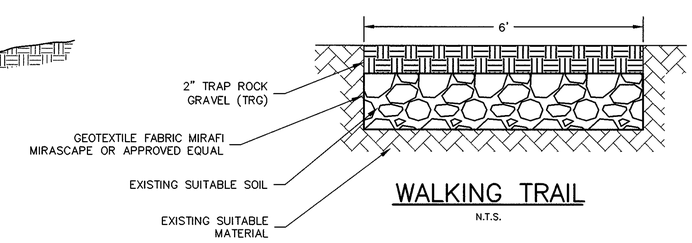

WALKING TRAIL

N.T.S.

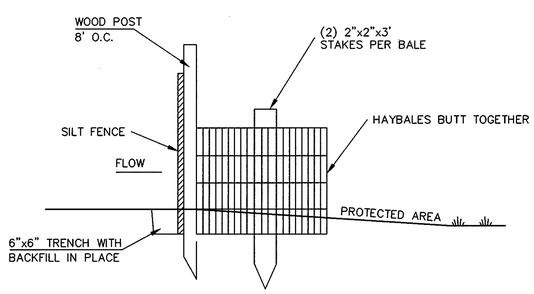

TEMPORARY SILTATION BARRIER W/ BALED STRAW FOR EROSION CONTROL

N.T.S.

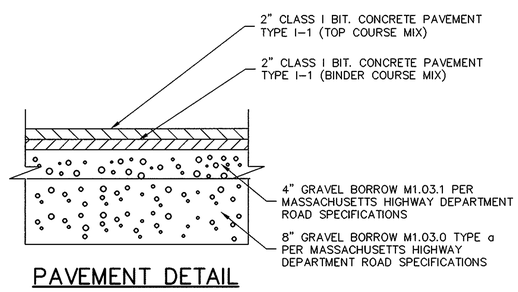

PAVEMENT DETAIL

N.T.S.

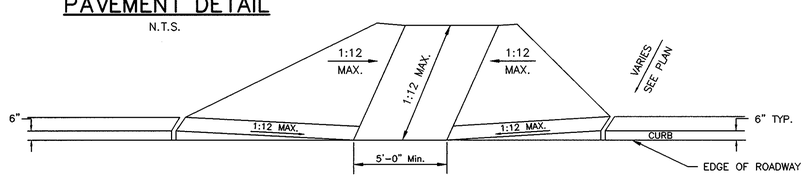

CEMENT CONC. WHEELCHAIR RAMP

N.T.S.

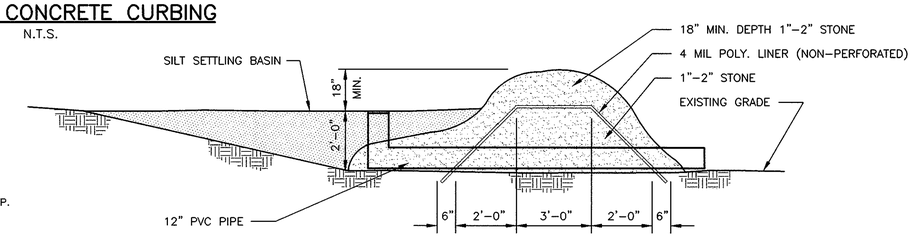

TEMPORARY SEDIMENTATION BASIN

N.T.S.

APPROVAL UNDER THE SUBDIVISION CONTROL LAW REQUIRED:
NORTHAMPTON PLANNING BOARD
DATE: 5.12.05

HUNTLEY
HUNTLEY ASSOCIATES, P.C.
SURVEYORS ENGINEERS LANDSCAPE ARCHITECTS
30 INDUSTRIAL DRIVE EAST
NORTHAMPTON, MASSACHUSETTS 01060

CONSTRUCTION DETAILS

REV. PB COND. 3/3/05

COMMONWEALTH OF MASSACHUSETTS MARK A. MCCLUSKY CIVIL No. 41747 4/7/05

SURVEYOR:	
FIELD WORK:	
ENGINEER:	TR
DESIGN:	TR
COMPS:	
DRAFTING:	JSM, TB
CHECKED:	MAM
HORIZ SCALE:	N/A
VERT SCALE:	

THE RIDGE
DEFINITIVE SUBDIVISION PLAN
IN
NORTHAMPTON, MASSACHUSETTS
PREPARED FOR
SOVEREIGN BUILDERS, INC.

PROJECT NO:	03–179
DRAWING NO:	179 SP
DATE:	9/2/04
SHEET NO.	12 OF 15

5/31/05 PB205 Pg 83

APPROVAL UNDER THE SUBDIVISION CONTROL LAW REQUIRED:
NORTHAMPTON PLANNING BOARD
DATE: 5.12.05

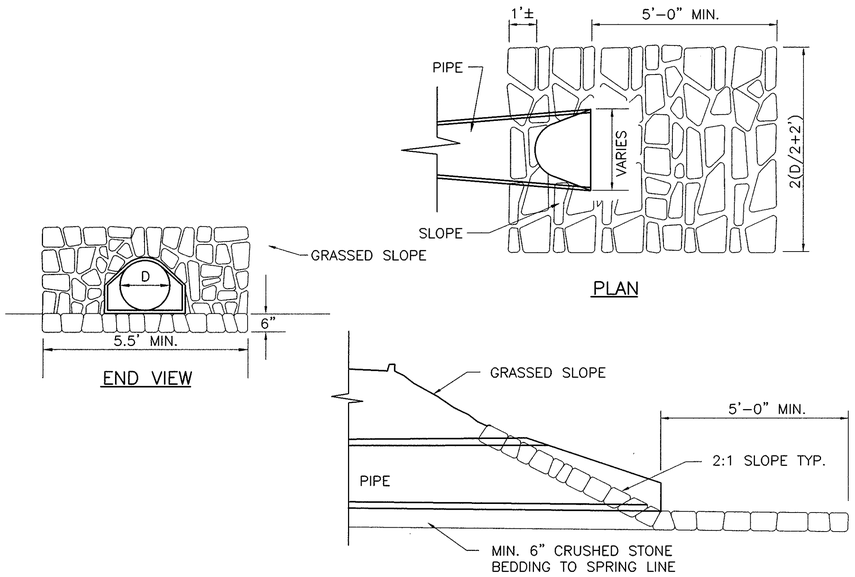

PLAN

STONE PIPE ENDS (WITH FLARED END SECTION)

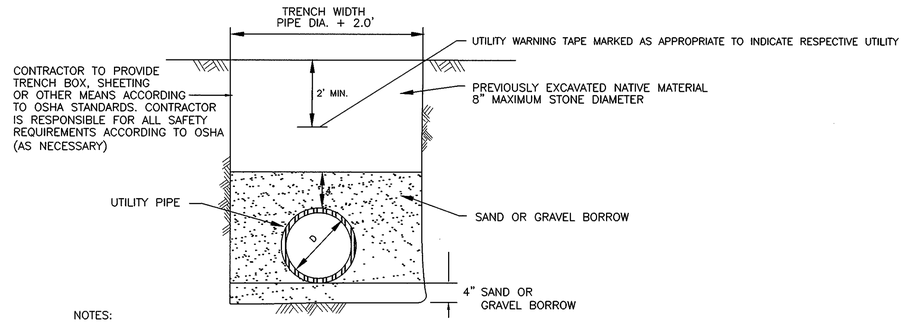

NOTES:

1 COMPACT ALL BACKFILL MATERIAL WITH VIBRATORY PLATE EQUIPMENT (MINIMUM TWO PASSES) TO A MINIMUM DENSITY OF 95 PERCENT OF THE STANDARD PROCTOR DENSITY AS DETERMINED BY ASTM D698.

2 PLACE BACKFILL MATERIALS IN MAXIMUM ONE FOOT LIFTS.

TYPICAL UTILITY LINE TRENCH SECTION

N.T.S.

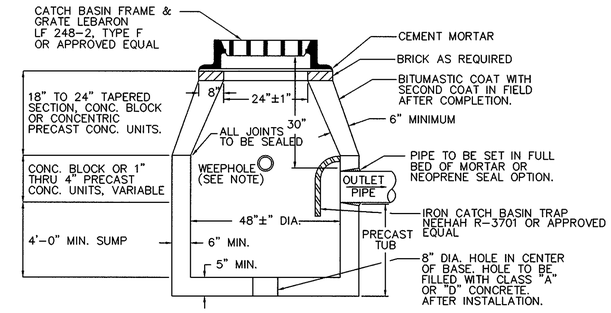

NOTE: WEEP HOLES TO BE 4" V.C. PIPE 12" LONG PLACED THROUGH EACH WALL OF CATCH BASIN. OUTSIDE END TO BE COVERED WITH 1/4" MESH GALVANIZED WIRE SCREEN. PLACE 1/4" C.Y. SCREENED GRAVEL (1" TO 1 1/2") AROUND OUTSIDE END OF PIPE. USE A MINIMUM OF 3 WEEP HOLES PER BASIN.

PRECAST CONCRETE CATCH BASIN SECTION

N.T.S.

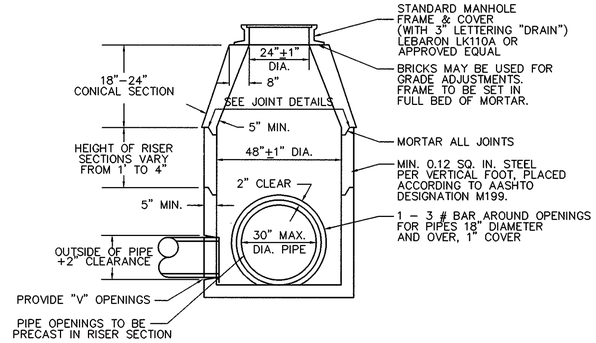

TYPICAL 4' PRECAST DRAIN MANHOLE

N.T.S.

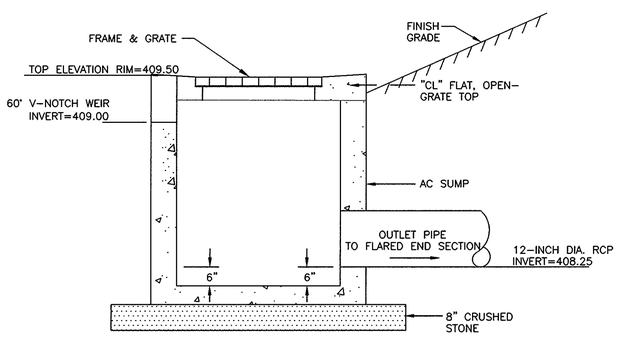

DETENTION BASIN "1" OUTLET STRUCTURE

N.T.S.

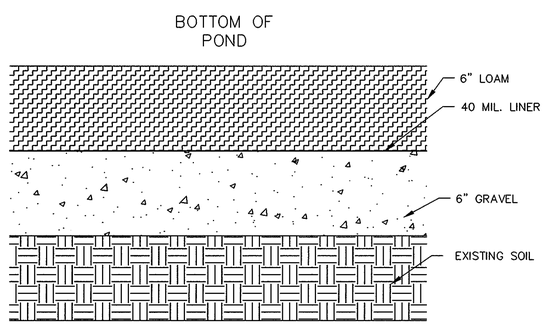

FOREBAY CONSTRUCTION DETAIL

N.T.S.

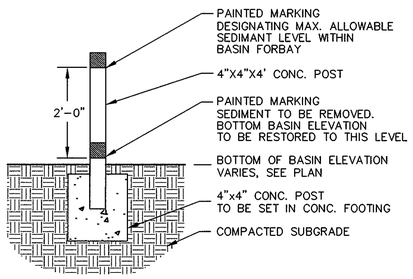

SEDIMENT INDICATOR POST

N.T.S.

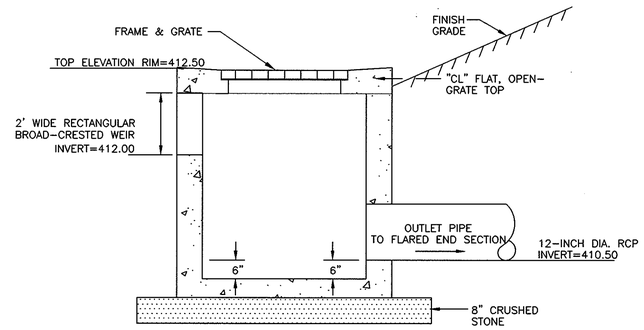

DETENTION BASIN "2" OUTLET STRUCTURE

N.T.S.

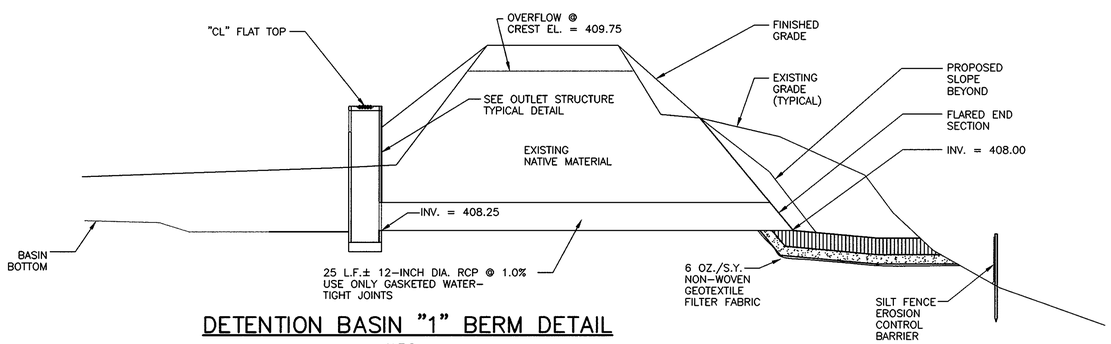

DETENTION BASIN "1" BERM DETAIL

N.T.S.

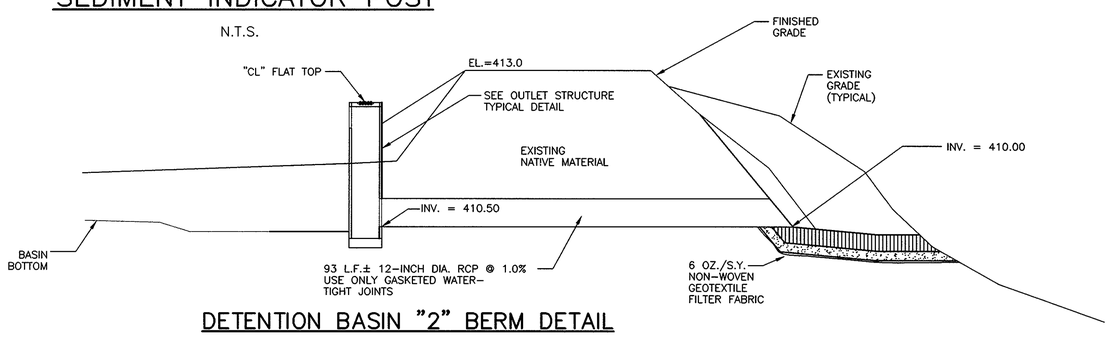

DETENTION BASIN "2" BERM DETAIL

N.T.S.

HUNTLEY
HUNTLEY ASSOCIATES, P.C.
SURVEYORS ENGINEERS LANDSCAPE ARCHITECTS
30 INDUSTRIAL DRIVE EAST
NORTHAMPTON, MASSACHUSETTS 01060

CONSTRUCTION DETAILS

REV. PB COND. 3/3/05

COMMONWEALTH OF MASSACHUSETTS MARK A. MCCLUSKY CIVIL NO. 41747 REGISTERED PROFESSIONAL ENGINEER 4/7/05

SURVEYOR:	
FIELD WORK:	
ENGINEER:	TR
DESIGN:	TR
COMPS:	
DRAFTING:	JSM, TB
CHECKED:	MAM
HORIZ SCALE:	–
VERT SCALE:	

THE RIDGE
DEFINITIVE SUBDIVISION PLAN
IN
NORTHAMPTON, MASSACHUSETTS
PREPARED FOR
SOVEREIGN BUILDERS, INC.

PROJECT NO:	03-179
DRAWING NO:	179 SP
DATE:	9/2/04
SHEET NO.	13 OF 15

5/31/05 PB 205 Pg 84

APPROVAL UNDER THE SUBDIVISION CONTROL LAW REQUIRED:
NORTHAMPTON PLANNING BOARD
DATE: 5.12.05

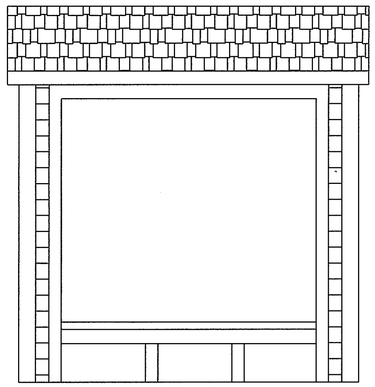

BUS STOP SHELTER (FRONT VIEW)
N.T.S.



BUS STOP SHELTER (SIDE VIEW)
N.T.S.

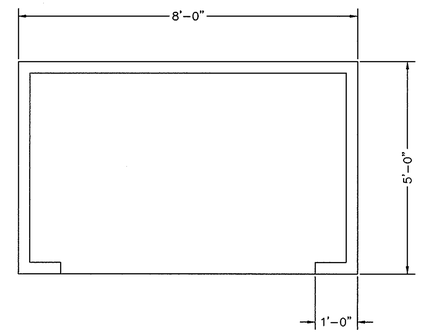

BUS STOP SHELTER (PLAN VIEW)
N.T.S.



BUS STOP SHELTER (REAR VIEW)
N.T.S.

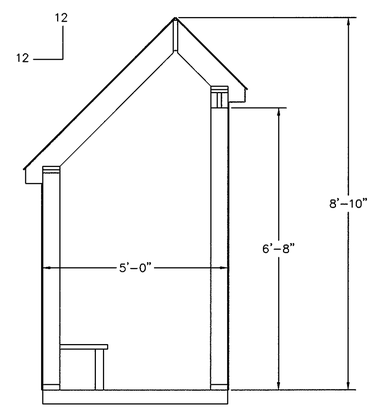

BUS STOP SHELTER (SECTION VIEW)
N.T.S.

NOTE: DETAILS PROVIDED BY SOVEREIGN BUILDERS

HUNTLEY
HUNTLEY ASSOCIATES, P.C.
SURVEYORS ENGINEERS LANDSCAPE ARCHITECTS
30 INDUSTRIAL DRIVE EAST
NORTHAMPTON, MASSACHUSETTS 01060

CONSTRUCTION DETAILS

COMMONWEALTH OF MASSACHUSETTS
MARK A. MOY
REGISTERED PROFESSIONAL ENGINEER
4/7/05

SURVEYOR:	
FIELD WORK:	
ENGINEER:	TR
DESIGN:	TR
COMPS:	
DRAFTING:	JSM, TB
CHECKED:	MAM
HORIZ SCALE:	–
VERT SCALE:	

THE RIDGE
DEFINITIVE SUBDIVISION PLAN
IN
NORTHAMPTON, MASSACHUSETTS
PREPARED FOR
SOVEREIGN BUILDERS, INC.

PROJECT NO:	03–179
DRAWING NO:	179 SP
DATE:	3/23/05

SHEET NO. 14 OF 15

5/31/05 PB 205 Pg 85

LUMINAIRE SCHEDULE

Symbol	Qty	Catalog Number	Description	Lamp	File	Lumens	LLF
○	6	GV050HP00XX5NX	Holophane Granville fixture on 20' pole	50W CLEAR HPS	39353.IES	4000	0.81

STATISTICS

Description	Symbol	Avg	Max	Min	Max/Min	Avg/Min
Colonial Drive	+	0.2 fc	0.4 fc	0.1 fc	4.0:1	2.4:1

NOTES

1. Holophane Granville fixtures are 50 watt high pressure sodium, mounted on 20' poles.
2. For lighting fixture pricing and information contact:

Holophane Lighting
David Rancatore
p) (508) 544-1570
f) (508) 544-1571

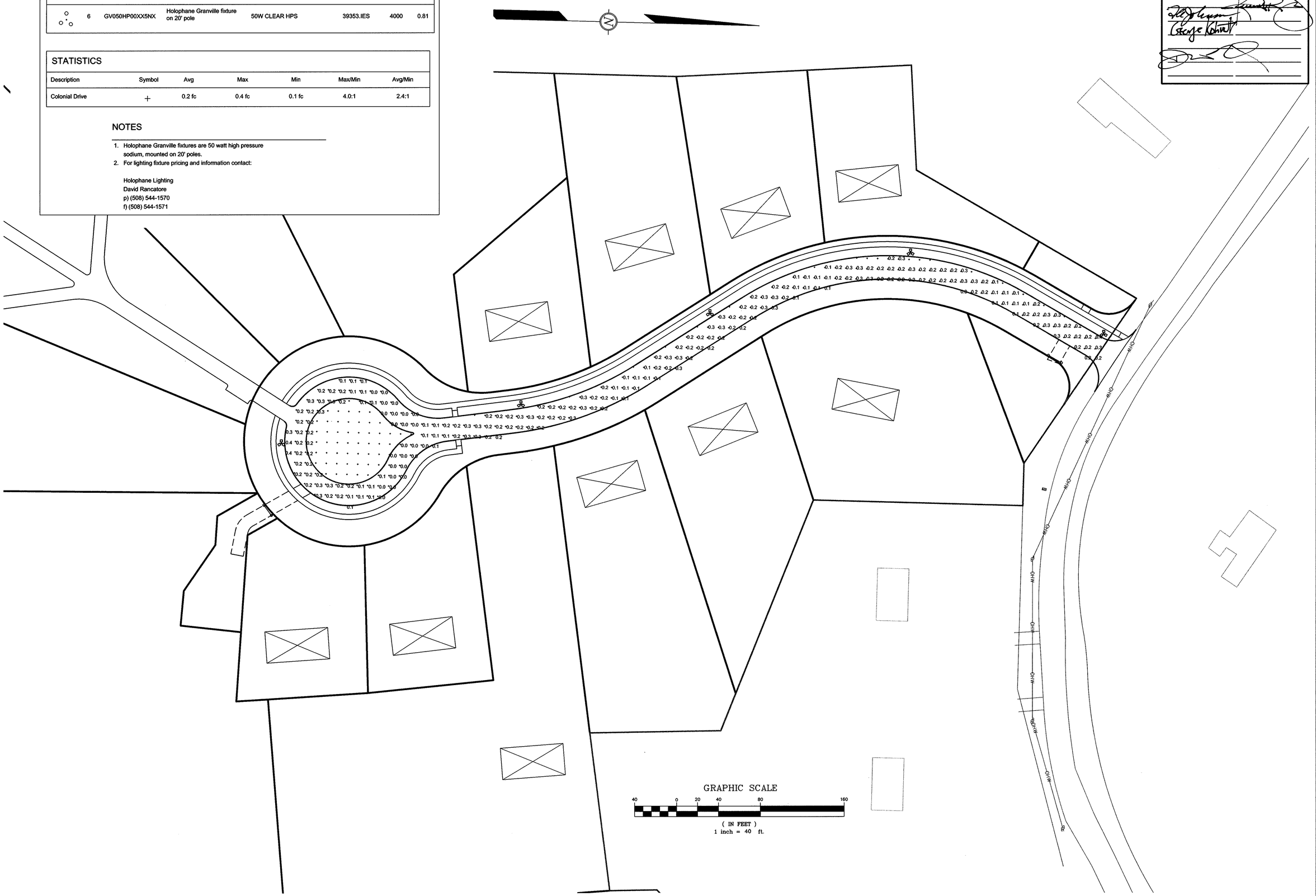

APPROVAL UNDER THE SUBDIVISION CONTROL LAW REQUIRED:
NORTHAMPTON PLANNING BOARD
DATE: 5.12.05

HUNTLEY
HUNTLEY ASSOCIATES, P.C.
SURVEYORS ENGINEERS LANDSCAPE ARCHITECTS
30 INDUSTRIAL DRIVE EAST
NORTHAMPTON, MASSACHUSETTS 01060

PHOTOMETRIC PLAN

COMMONWEALTH OF MASSACHUSETTS
MARK A. MOSCA
REGISTERED PROFESSIONAL ENGINEER
4/7/05

SURVEYOR:	PRL
FIELD WORK:	PC/RY
ENGINEER:	TR
DESIGN:	TR
COMPS:	
DRAFTING:	JSM, TB
CHECKED:	MAM
HORIZ SCALE:	1"=40'
VERT SCALE:	

THE RIDGE
DEFINITIVE SUBDIVISION PLAN
IN
NORTHAMPTON, MASSACHUSETTS
PREPARED FOR
SOVEREIGN BUILDERS, INC.

PROJECT NO:	03-179
DRAWING NO:	179 SP4
DATE:	9/2/04
SHEET NO.	15 OF 15